Sintropia Method

3746	76
Trees	Biodiversity

This report was automatically generated using Sintropia Method version 1. The goal is to measure how many tress over 1m high and 3cm of diameter there is on the regeneration area, and of how many different species.

Inspection #3
Generated on: 20/10/2025

Regenerator Data

Regenerator Address:
0xaC3Dd98E8025BD37Ca653f314B5CBE8492738919

Area size: 11.101 m²
Lat: -20.582193624615783, Lng: -47.23040602948788
Lat: -20.58141796493433, Lng: -47.230588699959156
Lat: -20.58050182210262, Lng: -47.230849659834746
Lat: -20.58037818243851, Lng: -47.230548761605405
Lat: -20.58060416487399, Lng: -47.23044437776008
Lat: -20.580720209813478, Lng: -47.23031389772558
Lat: -20.58197605352875, Lng: -47.22985752792508

Justification Report

Sampling radius: 5 m
Sampling area: 78.54 m²

Trees result

Ai = Inspected area
P1 = Sampling trees 1
Pn = Sampling trees n
Ap = Sampling area n
n = Number of samplings

Result = {[(P1 +...+ Pn) / n] * Ai} / Ap

Inspector report:
Ocorreu tudo bem com a inspeção. Era uma área bem biodiversa e agradável.

Biodiversity

coordinate
Lat:
-20.581894504570307
Lng:
-47.23015492480722

coordinate
Lat:
-20.581926817231036
Lng:
-47.230158729721225

coordinate
Lat:
-20.581897819485754
Lng:
-47.23015667714965



coordinate
Lat:
-20.581885518591733
Lng:
-47.2301249050432

coordinate
Lat:
-20.581898715598197
Lng:
-47.230172557910024



coordinate
Lat:
-20.58188766035965
Lng:
-47.23017034853369

coordinate
Lat:
-20.581923645101398
Lng:
-47.23014998591247

coordinate
Lat:
-20.58189944248686
Lng:
-47.23016317016484

coordinate
Lat:
-20.58189663601538
Lng:
-47.23015177276122

coordinate
Lat:
-20.581891259587785
Lng: -47.230142646865

coordinate
Lat:
-20.581304836373366
Lng:
-47.23032973421728

coordinate
Lat:
-20.58129421538814
Lng:
-47.23032833859366

coordinate
Lat:
-20.581304082842454
Lng:
-47.230335965902256

coordinate
Lat:
-20.58127081545018
Lng:
-47.23034003188144

coordinate
Lat:
-20.58126734035518
Lng:
-47.23029171061131

coordinate
Lat:
-20.58124893557209
Lng:
-47.230335042481315

coordinate
Lat:
-20.58127167087866

Lng:
-47.2303722772023

coordinate
Lat:
-20.58048855726752
Lng:
-47.230541938635966

coordinate
Lat:
-20.58054234492737
Lng:
-47.230611894367584

coordinate
Lat:
-20.580549138133946
Lng:
-47.23065141512502

coordinate
Lat:
-20.58056371787074
Lng:
-47.23066235059115

coordinate
Lat:
-20.580558139245106
Lng:
-47.23059682676691

coordinate
Lat:
-20.58052978966339
Lng:
-47.23054631883743

coordinate
Lat:
-20.58057267366551
Lng:
-47.23050995973363

coordinate
Lat:
-20.580682560775614
Lng:
-47.23067553312106

coordinate
Lat:
-20.58067437099688
Lng:
-47.23060473466951



coordinate
Lat:
-20.58063205517711
Lng:
-47.230414120931584

coordinate
Lat:
-20.580664562024584
Lng:
-47.230403235291774

coordinate
Lat:
-20.580790672024303
Lng:
-47.230304464091105

coordinate
Lat:
-20.580859568091274
Lng:
-47.23029949589757

coordinate
Lat:
-20.580897697717877
Lng:
-47.23041148470377

coordinate
Lat:
-20.580917834247135
Lng:
-47.23042897060171

coordinate
Lat:
-20.58092002342539
Lng:
-47.23043521588474

coordinate
Lat:
-20.580959401329775
Lng:
-47.23051382888008

coordinate
Lat:
-20.581057699032023
Lng:
-47.230586999392536

coordinate
Lat:
-20.581092309357913
Lng:
-47.23059320049667

coordinate
Lat:
-20.58112329099917
Lng:
-47.230576870575796

coordinate
Lat:
-20.58112292024265
Lng:
-47.23056240698139

coordinate
Lat: -20.5811321741371
Lng:
-47.230412864953195

coordinate
Lat:
-20.581133213703282
Lng:
-47.230472297806365

coordinate
Lat:
-20.58110449704735
Lng:
-47.23036664541368

coordinate
Lat: -20.581094655025
Lng:
-47.230381453159524

coordinate
Lat:
-20.58107938111276
Lng:
-47.23031238941475

coordinate
Lat:
-20.581281692082616
Lng:
-47.23041062034714

coordinate
Lat:
-20.58131116847637
Lng:
-47.230378995722475

coordinate
Lat:
-20.58134453119048
Lng:
-47.230393834264056

coordinate
Lat:
-20.581263813514838
Lng:
-47.230127377298246

coordinate
Lat:
-20.58127709358233
Lng:
-47.230129245048666

coordinate
Lat:
-20.581496173885935
Lng:
-47.230153213204765

coordinate
Lat:
-20.58157503566166
Lng:
-47.2301826690933

coordinate
Lat:
-20.581625565267295
Lng:
-47.230352244889716

coordinate
Lat:
-20.58167345777456
Lng:
-47.23030029227762

coordinate
Lat:
-20.581697385229322
Lng:
-47.23031286082404



coordinate
Lat:
-20.581709419291982
Lng:
-47.23034277610946

coordinate
Lat:
-20.581738596043618
Lng:
-47.23036337538788



coordinate
Lat:
-20.581759303325878
Lng:
-47.23042903891359

coordinate
Lat:
-20.58179366402893
Lng:
-47.23040544792927

coordinate
Lat:
-20.581744839704896
Lng:
-47.23030516020005

coordinate
Lat:
-20.581680630393087
Lng:
-47.229998551786025



coordinate
Lat: -20.5816818721705
Lng:
-47.23007218773564

coordinate
Lat:
-20.581681007336282
Lng:
-47.230199603127076

coordinate
Lat:
-20.581698363397628
Lng:
-47.22998561224785

coordinate
Lat:
-20.581697989642283
Lng:
-47.22999729517687

coordinate
Lat:
-20.58172559120377
Lng:
-47.23007661209502

coordinate
Lat:



coordinate
Lat:

coordinate
Lat:

coordinate
Lat:

Lat:
-20.58173356260602
Lng:
-47.23021007506766

Lat:
-20.58180434876877
Lng:
-47.23023907400069

Lat:
-20.581797773311557
Lng:
-47.23027382644105

Lat:
-20.581834975149125
Lng:
-47.23038699479289

coordinate
Lat:
-20.581860089803623
Lng:
-47.23038283211836



coordinate
Lat:
-20.581864039113952
Lng:
-47.23029940117746



coordinate
Lat:
-20.58178792226408
Lng:
-47.230078977815594

coordinate
Lat:
-20.581926232108312
Lng:
-47.22994763410839



coordinate
Lat:
-20.581943950687165
Lng:
-47.229924523397905



coordinate
Lat:
-20.581943407388106
Lng:
-47.22996760506103

coordinate
Lat:
-20.581964314971216
Lng:
-47.230028650886126



coordinate
Lat:
-20.581992804854668
Lng: -47.229919920008

Trees

Sampling #1

20	5 m	78.54 m²
Trees	Radius	Area

coordinate
Lat:
-20.581894504570307
Lng:
-47.23015492480722

coordinate
Lat:
-20.581926817231036
Lng:
-47.230158729721225

coordinate
Lat:
-20.58188237445972
Lng:
-47.2301401356766

coordinate
Lat:
-20.581897819485754
Lng:
-47.23015667714965

coordinate
Lat:
-20.581885518591733
Lng:
-47.2301249050432

coordinate
Lat:
-20.581898715598197
Lng:
-47.230172557910024



coordinate
Lat:
-20.58188766035965
Lng:
-47.23017034853369

coordinate
Lat:
-20.581923645101398
Lng:
-47.23014998591247

coordinate
Lat:
-20.581904225074272
Lng:
-47.230188141766185

coordinate
Lat:
-20.581896959401362
Lng:
-47.23019097008735

coordinate
Lat:
-20.58189944248686
Lng:
-47.23016317016484

coordinate
Lat:
-20.58189663601538
Lng:
-47.23015177276122

coordinate
Lat:
-20.581891259587785
Lng: -47.230142646865



coordinate
Lat:
-20.581887760731618
Lng:
-47.230112779991586



coordinate
Lat: -20.5818619851521
Lng:
-47.23014100451781

coordinate
Lat:
-20.58184783519211
Lng:
-47.23016325742265

coordinate
Lat:
-20.581841370134164
Lng:
-47.230153998880496

coordinate
Lat:
-20.58189649619823
Lng:
-47.23018321598421

coordinate
Lat:
-20.581882277167544
Lng:
-47.23015023380095

coordinate
Lat:
-20.581904439070684
Lng:
-47.230168201245306

Sampling #2

33	5 m	78.54 m²
Trees	Radius	Area

coordinate
Lat:
-20.581304836373366
Lng:
-47.23032973421728

coordinate
Lat:
-20.58129421538814
Lng:
-47.23032833859366



coordinate
Lat:
-20.581284822778542
Lng:
-47.23030632094178

coordinate
Lat:
-20.581304082842454
Lng:
-47.230335965902256

coordinate
Lat:
-20.581289236011507
Lng:
-47.23034226534147



coordinate
Lat:
-20.58129015031109
Lng:
-47.230344749955464

coordinate
Lat:
-20.58128412076007
Lng:
-47.230350241749726

coordinate
Lat:
-20.581287614327994
Lng:
-47.23036235227398

coordinate
Lat:
-20.58129576960757
Lng:
-47.23035888858448

coordinate
Lat:
-20.58127081545018
Lng:
-47.23034003188144

coordinate
Lat:
-20.581258226002436
Lng:
-47.23032169017625

coordinate
Lat:
-20.581268382242374
Lng:
-47.230311401896124

coordinate
Lat:
-20.58126734035518
Lng:
-47.23029171061131

coordinate
Lat:
-20.58127426501686

Lng:
-47.23029727498881

coordinate
Lat:
-20.58124893557209
Lng:
-47.230335042481315

coordinate
Lat:
-20.581232547973837
Lng:
-47.23031527660946

coordinate

coordinate

coordinate

coordinate

Lat:
-20.58122762364534
Lng:
-47.230316468081284

Lat:
-20.58124492485659
Lng:
-47.23031929216709

Lat:
-20.581244105373617
Lng:
-47.23033214979306

Lat:
-20.581229247209965
Lng:
-47.23033408101742

coordinate
Lat:
-20.581240617134632
Lng:
-47.23032911037146

coordinate
Lat:
-20.581252459233635
Lng:
-47.23034251302519

coordinate
Lat:
-20.581256978418004
Lng:
-47.2303469625417

coordinate
Lat:
-20.581254169778326
Lng:
-47.23035877798427

coordinate
Lat:
-20.581251008743394
Lng:
-47.23036009968853

coordinate
Lat:
-20.581260922619595
Lng:
-47.23035763377764

coordinate
Lat:
-20.58126246148288
Lng:
-47.23036801509608

coordinate
Lat:
-20.58127167087866
Lng:
-47.2303722772023

coordinate
Lat:
-20.581295874331495
Lng:
-47.23036048581612

coordinate
Lat:
-20.58130332757914
Lng:
-47.23034674625389

coordinate
Lat:
-20.58130649769679
Lng:
-47.23033006725714

coordinate
Lat:
-20.581304047049642
Lng:
-47.23034127445526

coordinate
Lat:
-20.581290240348828
Lng:
-47.23031745587869

Regeneration Index

Trees

Indicator to measure the total amount of trees, palm trees and other plants over 1m high and 3cm in diameter in the regenerating area. How many trees, palm trees and other plants over 1m high and 3cm in diameter there is in the regenerating area? Justify your answer in the report.

Index	Description	Result
1	Trees >= 50000	REGENERATIVE 6 = +32 pts
2	Trees >= 25000 && Trees < 50000	REGENERATIVE 5 = +16 pts
3	Trees >= 12500 && Trees < 25000	REGENERATIVE 4 = +8 pts
4	Trees >= 6250 && Trees < 12500	REGENERATIVE 3 = +4 pts
5	Trees >= 3125 && Trees < 6250	REGENERATIVE 2 = +2 pts
6	Trees >= 20 && Trees < 3125	REGENERATIVE 1 = +1 pts
7	Trees < 20	NEUTRO = 0 pts

Biodiversity

Indicator to measure the level of biodiversity of trees, palm trees and other plants over 1m high and 3cm in diameter in the regenerating area. How many different species are there in the area? Each different species is equivalent to one point and only trees and plants managed or planted by the regenerator should be counted.

Index	Description	Result
1	Biodiversity >= 160	REGENERATIVE 6 = +32 pts
2	Biodiversity >= 80 && Biodiversity < 160	REGENERATIVE 5 = +16 pts
3	Biodiversity >= 40 && Biodiversity < 80	REGENERATIVE 4 = +8 pts
4	Biodiversity >= 20 && Biodiversity < 40	REGENERATIVE 3 = +4 pts
5	Biodiversity >= 10 && Biodiversity < 20	REGENERATIVE 2 = +2 pts
6	Biodiversity >= 5 && Biodiversity < 10	REGENERATIVE 1 = +1 pts
7	Biodiversity < 5	NEUTRO = 0 pts