Sintropia Method

9852	43
Trees	Biodiversity

This report was automatically generated using Sintropia Method version 1. The goal is to measure how many tress over 1m high and 3cm of diameter there is on the regeneration area, and of how many different species.

Inspection #16
Generated on: 04/11/2025

Regenerator Data

Regenerator Address:
0x7B1f919aE02FDa3F25DCc9b0660daBD4f59d14E3

Area size: 38.689 m²
Lat: -15.630007384002326, Lng: -47.56170311917157
Lat: -15.630096187205226, Lng: -47.56063608167881
Lat: -15.628294754481104, Lng: -47.56128157633745
Lat: -15.626823140628545, Lng: -47.56188754824734
Lat: -15.627013436119157, Lng: -47.56258573327335
Lat: -15.62835340528045, Lng: -47.56226818709911

Justification Report

Sampling radius: 5 m
Sampling area: 78.54 m²

Trees result

Ai = Inspected area
P1 = Sampling trees 1
Pn = Sampling trees n
Ap = Sampling area n
n = Number of samplings

Result = {[(P1 +...+ Pn) / n] * Ai} / Ap

Inspector report:
Inspeção ocorreu tudo certo, fui muito bem recebido. A área da chácara é muito bacana, um plantio bem adensado e um tanto quanto biodoverso. Lindo de ver o trabalho de regeneração dessa área. Algumas áreas estão bem densas, já outras ainda cabem muito mais árvores.

Biodiversity

coordinate
Lat: -15.6278629
Lng: -47.5616901

coordinate
Lat: -15.6280284
Lng: -47.5620383

coordinate
Lat: -15.6278947
Lng: -47.5621206

coordinate
Lat: -15.6279808
Lng: -47.5620699

coordinate
Lat: -15.6280286
Lng: -47.5620561

coordinate
Lat: -15.628052
Lng: -47.5620058

coordinate
Lat: -15.6280325
Lng: -47.5620082

coordinate
Lat: -15.6280624
Lng: -47.5620003

coordinate
Lat: -15.6281141
Lng: -47.5619849

coordinate
Lat: -15.6281281
Lng: -47.5619848

coordinate
Lat: -15.6281339
Lng: -47.562029

coordinate
Lat: -15.6281794
Lng: -47.5620091

coordinate
Lat: -15.6282275
Lng: -47.5620047

coordinate
Lat: -15.6282002
Lng: -47.5619965

coordinate
Lat: -15.6281986
Lng: -47.5619971

coordinate
Lat: -15.6282817
Lng: -47.5619683

coordinate
Lat: -15.6282315
Lng: -47.5620079

coordinate
Lat: -15.6282746
Lng: -47.5619613

coordinate
Lat: -15.6282559
Lng: -47.5619575

coordinate
Lat: -15.6283601
Lng: -47.5618951

coordinate
Lat: -15.6283447
Lng: -47.5618695

coordinate
Lat: -15.6283344
Lng: -47.5618503

coordinate
Lat: -15.628375
Lng: -47.5617882

coordinate
Lat: -15.6283558
Lng: -47.561732

coordinate
Lat: -15.62837
Lng: -47.5617767

coordinate
Lat: -15.62837
Lng: -47.5617767

coordinate
Lat: -15.62843
Lng: -47.5617967

coordinate
Lat: -15.6284232
Lng: -47.5616995

coordinate
Lat: -15.6284276
Lng: -47.5617324

coordinate
Lat: -15.6284529
Lng: -47.5616663

coordinate
Lat: -15.6284536
Lng: -47.5616875

coordinate
Lat: -15.6284708
Lng: -47.5616852

coordinate
Lat: -15.6284706
Lng: -47.5616841

coordinate
Lat: -15.6284687
Lng: -47.5616084

coordinate
Lat: -15.6284645
Lng: -47.5615975

coordinate
Lat: -15.6285391
Lng: -47.5616114

coordinate
Lat: -15.6288308
Lng: -47.5616778

coordinate
Lat: -15.6288362
Lng: -47.5616732

coordinate
Lat: -15.6287912
Lng: -47.5617411

coordinate
Lat: -15.6287494
Lng: -47.5618607

coordinate
Lat: -15.6281142
Lng: -47.5621972

coordinate
Lat: -15.6274768
Lng: -47.5623554

coordinate
Lat: -15.6274777
Lng: -47.5622834

Trees

Sampling #1

25	5 m	78.54 m²
Trees	Radius	Area

coordinate
Lat: -15.6272808
Lng: -47.5619331



coordinate
Lat: -15.6272809
Lng: -47.5619323

coordinate
Lat: -15.6272802
Lng: -47.5619321

coordinate
Lat: -15.6272555
Lng: -47.561951

coordinate
Lat: -15.6272487
Lng: -47.5619465

coordinate
Lat: -15.6272486

coordinate
Lat: -15.6272494

coordinate
Lat: -15.6272503

coordinate
Lat: -15.6272821

coordinate
Lat: -15.6272569

Lng: -47.5619469

Lng: -47.561948

Lng: -47.5619479

Lng: -47.5618649

Lng: -47.5619037

coordinate
Lat: -15.6272348
Lng: -47.5619257

coordinate
Lat: -15.6272269
Lng: -47.5619357

coordinate
Lat: -15.6272167
Lng: -47.5619475

coordinate
Lat: -15.6272167
Lng: -47.5619467

coordinate
Lat: -15.6272167
Lng: -47.5619467

coordinate
Lat: -15.6272167
Lng: -47.5619467

coordinate
Lat: -15.6272167
Lng: -47.5619467

coordinate
Lat: -15.6272167
Lng: -47.5619467

coordinate
Lat: -15.6272157
Lng: -47.5619484

coordinate
Lat: -15.6272176
Lng: -47.5619479



coordinate
Lat: -15.6272183
Lng: -47.5619472

coordinate
Lat: -15.6272164
Lng: -47.5619477

coordinate
Lat: -15.6272169
Lng: -47.5619489

coordinate
Lat: -15.6272597
Lng: -47.5619622

coordinate
Lat: -15.6272527
Lng: -47.561965

Sampling #2

15	5 m	78.54 m²
Trees	Radius	Area

coordinate
Lat: -15.6293278
Lng: -47.5615938

coordinate
Lat: -15.6293281
Lng: -47.561595

coordinate
Lat: -15.6293296
Lng: -47.5616039



coordinate
Lat: -15.6293403
Lng: -47.561606

coordinate
Lat: -15.6293466
Lng: -47.5616042

coordinate
Lat: -15.6293523
Lng: -47.5616006

coordinate
Lat: -15.6293531
Lng: -47.5615993

coordinate
Lat: -15.6293523
Lng: -47.5615998

coordinate
Lat: -15.6293517
Lng: -47.5616

coordinate
Lat: -15.6293525
Lng: -47.561599

coordinate
Lat: -15.629352
Lng: -47.5615992

coordinate
Lat: -15.6293508
Lng: -47.5616023

coordinate
Lat: -15.6293331
Lng: -47.5615806

coordinate
Lat: -15.6293082
Lng: -47.5615939

coordinate
Lat: -15.6292838
Lng: -47.5615736

Regeneration Index

Trees
Indicator to measure the total amount of trees, palm trees and other plants over 1m high and 3cm in diameter in the regenerating area. How many trees, palm trees and other plants over 1m high and 3cm in diameter there is in the regenerating area? Justify your answer in the report.

Index	Description	Result
1	Trees >= 50000	REGENERATIVE 6 = +32 pts
2	Trees >= 25000 && Trees < 50000	REGENERATIVE 5 = +16 pts
3	Trees >= 12500 && Trees < 25000	REGENERATIVE 4 = +8 pts
4	Trees >= 6250 && Trees < 12500	REGENERATIVE 3 = +4 pts
5	Trees >= 3125 && Trees < 6250	REGENERATIVE 2 = +2 pts
6	Trees >= 20 && Trees < 3125	REGENERATIVE 1 = +1 pts
7	Trees < 20	NEUTRO = 0 pts

Biodiversity
Indicator to measure the level of biodiversity of trees, palm trees and other plants over 1m high and 3cm in diameter in the regenerating area. How many different species are there in the area? Each different species is equivalent to one point and only trees and plants managed or planted by the regenerator should be counted.

Index	Description	Result
1	Biodiversity >= 160	REGENERATIVE 6 = +32 pts
2	Biodiversity >= 80 && Biodiversity < 160	REGENERATIVE 5 = +16 pts
3	Biodiversity >= 40 && Biodiversity < 80	REGENERATIVE 4 = +8 pts
4	Biodiversity >= 20 && Biodiversity < 40	REGENERATIVE 3 = +4 pts
5	Biodiversity >= 10 && Biodiversity < 20	REGENERATIVE 2 = +2 pts
6	Biodiversity >= 5 && Biodiversity < 10	REGENERATIVE 1 = +1 pts
7	Biodiversity < 5	NEUTRO = 0 pts