Sintropia Method

1937	90
Trees	Biodiversity

This report was automatically generated using Sintropia Method version 1. The goal is to measure how many tress over 1m high and 3cm of diameter there is on the regeneration area, and of how many different species.

Inspection #20
Generated on: 06/11/2025

Regenerator Data

Regenerator Address:
0xaadbB4bb9B8696870c2C8ef94447858b8a6F2117

Area size: 7.243 m²
Lat: -21.762282728232663, Lng: -48.147645744140476
Lat: -21.76188589477978, Lng: -48.14792891559756
Lat: -21.761566550782746, Lng: -48.147369778748555
Lat: -21.76162290602184, Lng: -48.14734196726633
Lat: -21.761277729675882, Lng: -48.1466795478494
Lat: -21.761524284177924, Lng: -48.14643935777386
Lat: -21.76174260311636, Lng: -48.14677081475185
Lat: -21.761639285247412, Lng: -48.1469124004804
Lat: -21.761775476968282, Lng: -48.14710455254064
Lat: -21.76188583912932, Lng: -48.147016061460164

Justification Report

Sampling radius: 5 m
Sampling area: 78.54 m²

Trees result

Ai = Inspected area
P1 = Sampling trees 1
Pn = Sampling trees n
Ap = Sampling area n
n = Number of samplings

Result = {[(P1 +...+ Pn) / n] * Ai} / Ap

Inspector report:
Foi uma experiência ótima.. O trabalho de inspeção permite maior aproximação com as plantas e aguça a observação. O sítio Portal da Mata é um ambiente muito sereno e acolhedor.

Biodiversity

coordinate
Lat:
-21.761528690174572
Lng:
-48.1464689413706



coordinate
Lat:
-21.761569344033337
Lng:
-48.146530249289505

coordinate
Lat:
-21.761577457657125
Lng:
-48.14654292838292

coordinate
Lat:
-21.761516027652547
Lng:
-48.14646058332364

coordinate
Lat:
-21.761459283910394
Lng:
-48.146506399061316

coordinate
Lat:
-21.76139215809577
Lng:
-48.14657611727816

coordinate
Lat:
-21.76137723838695
Lng:
-48.146590551295574

coordinate
Lat:
-21.76136642246624
Lng:
-48.14659769951685

coordinate
Lat:
-21.761376606196766
Lng:

coordinate
Lat:
-21.761413046961398
Lng:

coordinate
Lat:
-21.761427231237533
Lng:

coordinate
Lat:
-21.761484572443088
Lng:

-48.14662583571229 -48.146663248849705 -48.14671472132121 -48.14669178452417



coordinate
Lat:
-21.761495849127485
Lng:
-48.14668943055555

coordinate
Lat:
-21.76153001823782
Lng:
-48.14664171432814

coordinate
Lat:
-21.76153548680575
Lng:
-48.1467152733626

coordinate
Lat:
-21.761537441297566
Lng:
-48.14676387373802



coordinate
Lat:
-21.76171219377568
Lng:
-48.14679615668346

coordinate
Lat:
-21.76172600404442
Lng:
-48.14679111017406

coordinate
Lat:
-21.76171495817202
Lng:
-48.14679650580977



coordinate
Lat:
-21.761584775522905
Lng:
-48.14686267946502



coordinate
Lat:
-21.761527866177964
Lng:
-48.14687949933452

coordinate
Lat:
-21.761494048688895
Lng:
-48.14686856259922

coordinate
Lat:
-21.761484489153894
Lng:
-48.146868174119675

coordinate
Lat:
-21.761503986236338
Lng:
-48.146890022713535

coordinate
Lat:
-21.761500209931242
Lng:
-48.146900610332196

coordinate
Lat:
-21.76152916873904
Lng:
-48.14690480628945

coordinate
Lat:
-21.76152820739841
Lng:
-48.14692858033292

coordinate
Lat:
-21.761540541060576
Lng:
-48.14692808494354

coordinate
Lat:
-21.761548562783418
Lng:
-48.146930595200615

coordinate
Lat:
-21.761521623875193
Lng:
-48.146939732178126

coordinate
Lat:
-21.761564391832625
Lng:
-48.14696107188002



coordinate
Lat:
-21.761573943170553
Lng:
-48.146962432507344

coordinate
Lat:
-21.761624904799227
Lng:
-48.14697492716238

coordinate
Lat:
-21.761603531303386
Lng:
-48.14697920881954

coordinate
Lat:
-21.76160297578204
Lng:
-48.14696843008348

coordinate
Lat:
-21.76163810231704
Lng:
-48.14695754747102

coordinate
Lat:
-21.761673586987165
Lng:
-48.14702556129677

coordinate
Lat:
-21.761628295099978
Lng:
-48.14710519180805

coordinate
Lat:
-21.761690948071013
Lng:
-48.14711452037589

coordinate
Lat:
-21.761682930212263
Lng:
-48.14714770021356

coordinate
Lat:
-21.76172922636943
Lng:
-48.14713195330489

coordinate
Lat:
-21.761398797787134
Lng:
-48.14683418957651

coordinate
Lat:
-21.76146071829858
Lng:
-48.14687784765238

coordinate
Lat:
-21.76145553657843
Lng:
-48.14689911598333

coordinate
Lat:
-21.76145495089562
Lng:
-48.1468988990536

coordinate
Lat:
-21.76146793814173
Lng:
-48.146912539851385



coordinate
Lat:
-21.76148620993566
Lng:
-48.14692466293564

coordinate
Lat:
-21.761495979932427
Lng:
-48.14693352680985

coordinate
Lat:
-21.76149599662437
Lng:
-48.146980246380956



coordinate
Lat:
-21.761490621601393
Lng:
-48.14699990962603

coordinate
Lat:
-21.76154916626318
Lng:
-48.14702703741322

coordinate
Lat:
-21.76154554414582
Lng:
-48.14703938053794

coordinate
Lat:
-21.76155934664768
Lng:
-48.147066885621655



coordinate
Lat:
-21.761612530874743
Lng:
-48.14712232870524

coordinate
Lat:
-21.76164186482858
Lng:
-48.14713952201511

coordinate
Lat:
-21.761624110286622
Lng:
-48.14720037519064

coordinate
Lat:
-21.76165261122718
Lng:
-48.14725066660226

coordinate
Lat:
-21.761679289306052
Lng:
-48.1472846348098

coordinate
Lat:
-21.761669052222853
Lng:
-48.14730299804018

coordinate
Lat:
-21.761665349225666
Lng:
-48.14730113821289

coordinate
Lat:
-21.76165136288958
Lng:
-48.14730324230102

coordinate
Lat:
-21.761634704474876
Lng:
-48.14731976478385

coordinate
Lat:
-21.76164598899862
Lng:
-48.14731779793324

coordinate
Lat:
-21.761639108126918
Lng:
-48.147332536772225

coordinate

coordinate

coordinate

coordinate

Lat:
-21.761691282043298
Lng:
-48.147337743735534

Lat:
-21.761667241047107
Lng:
-48.147351087279695

Lat:
-21.761659379510156
Lng:
-48.14734018608107

Lat:
-21.761658848826137
Lng:
-48.14734771197371

coordinate
Lat:
-21.76168036161733
Lng:
-48.14735812759949

coordinate
Lat:
-21.76186012404777
Lng:
-48.14705533886279

coordinate
Lat:
-21.761851174674824
Lng:
-48.147084729824435

coordinate
Lat:
-21.761867978608578
Lng:
-48.14714706430867

coordinate
Lat:
-21.761928121185253
Lng:
-48.14710539533609



coordinate
Lat:
-21.761940261362863
Lng:
-48.14712988334853

coordinate
Lat:
-21.761692457774338
Lng:
-48.147160698431286

coordinate
Lat:
-21.761701982245526
Lng:
-48.147408420118026

coordinate
Lat:
-21.761742099903433
Lng:
-48.14742257584341

coordinate
Lat:
-21.761738423218766
Lng:
-48.14742236208127

coordinate
Lat:
-21.76179051391502
Lng:
-48.14740657663618

coordinate
Lat:
-21.761785187434658
Lng:
-48.147484550218344

coordinate
Lat:
-21.76180603737299
Lng:
-48.147544974675206

coordinate
Lat:
-21.76184715564063
Lng:
-48.14753911078982

coordinate
Lat:
-21.76181696628817
Lng:
-48.14755182593642

coordinate
Lat:
-21.761809571132776
Lng:
-48.14756597884563

coordinate
Lat:
-21.761810031302687
Lng:
-48.1475745944273

coordinate
Lat:
-21.761853250684887
Lng:
-48.147600675158216

coordinate
Lat:
-21.761954541361014
Lng:
-48.147749992412514

coordinate
Lat:
-21.761933390790887
Lng:
-48.14774240956482

coordinate
Lat:
-21.761976379899114
Lng:
-48.147726335863254



coordinate
Lat:
-21.762014583793306
Lng:
-48.14765446811555

Trees

Sampling #1

17	5 m	78.54 m²
Trees	Radius	Area

coordinate
Lat:
-21.761638044182142
Lng:
-48.14705560802446

coordinate
Lat: -21.7616399257311
Lng:
-48.147070226644765

coordinate
Lat:
-21.761641077237694
Lng:
-48.14704201550421

coordinate
Lat:
-21.761665678435815
Lng:
-48.14701994733934

coordinate

coordinate

coordinate

coordinate

coordinate
Lat:
-21.761680473554403
Lng:
-48.14701232014473

coordinate
Lat:
-21.76168563321532
Lng:
-48.14700786417274

coordinate
Lat:
-21.761685897617472
Lng:
-48.14702700998277

coordinate
Lat:
-21.761684738921947
Lng:
-48.14701874059034

coordinate
Lat:
-21.761640848557132
Lng:
-48.14701203752761

coordinate
Lat:
-21.761633035882127
Lng:
-48.14701814218083

coordinate
Lat:
-21.76162504414215
Lng:
-48.14703952169273

coordinate
Lat:
-21.76162391959624
Lng:
-48.14703137910014

coordinate
Lat:
-21.76164210760577
Lng:
-48.147017451295035

coordinate
Lat:
-21.76166293827779
Lng:
-48.14699520443993

coordinate
Lat:
-21.76165539276567
Lng:
-48.14708496478791

coordinate
Lat:
-21.761652607911312
Lng:
-48.14708838489215

coordinate
Lat:
-21.761697830588034
Lng:
-48.14707593402414

Sampling #2

25	5 m	78.54 m²
Trees	Radius	Area

coordinate
Lat:
-21.76172622845659
Lng:
-48.14747105300922

coordinate
Lat:
-21.761711786575734
Lng:
-48.14748497623337

coordinate
Lat:
-21.761706138003078
Lng:
-48.147480753824304

coordinate
Lat:
-21.761714446497134
Lng:
-48.14748451976865

coordinate
Lat:
-21.76172908271779
Lng:
-48.14746672324113

coordinate
Lat:
-21.761721583959716
Lng:
-48.14747285242273

coordinate
Lat:
-21.761719007342816
Lng:
-48.14747548161205

coordinate
Lat:
-21.761711859879693
Lng:
-48.14746840400585

coordinate
Lat:
-21.76172293971575
Lng:
-48.14747170184002

coordinate
Lat:
-21.761743171556667
Lng:
-48.14746672890623

coordinate
Lat:
-21.761739975647867
Lng:
-48.147466234884256

coordinate
Lat: -21.7617390972463
Lng:
-48.14746179411934



coordinate
Lat:
-21.761736291000094
Lng:
-48.14745659745693

coordinate
Lat: -21.7617457239537
Lng:
-48.147445434489974

coordinate
Lat:
-21.76173766449548
Lng:
-48.14746331849263

coordinate
Lat:
-21.761742374053025
Lng:
-48.14746481197012



coordinate
Lat:
-21.761735905346598
Lng:
-48.14749810405886

coordinate
Lat:
-21.76174047620419
Lng:
-48.1475008896311

coordinate
Lat:
-21.761731778986498
Lng:
-48.14750843884868

coordinate
Lat:
-21.761727686845635
Lng:
-48.14750958478742



coordinate
Lat:
-21.761724716058463
Lng:
-48.14752086808412

coordinate
Lat:
-21.761765975215862
Lng:
-48.14750072834603

coordinate
Lat:
-21.761784237233684
Lng:
-48.147488579299925

coordinate
Lat:
-21.761775750893705
Lng:
-48.14748630812452

coordinate
Lat:
-21.76174044881261
Lng:
-48.14748946206067

Regeneration Index

Trees
Indicator to measure the total amount of trees, palm trees and other plants over 1m high and 3cm in diameter in the regenerating area. How many trees, palm trees and other plants over 1m high and 3cm in diameter there is in the regenerating area? Justify your answer in the report.

Index	Description	Result
1	Trees >= 50000	REGENERATIVE 6 = +32 pts
2	Trees >= 25000 && Trees < 50000	REGENERATIVE 5 = +16 pts
3	Trees >= 12500 && Trees < 25000	REGENERATIVE 4 = +8 pts
4	Trees >= 6250 && Trees < 12500	REGENERATIVE 3 = +4 pts
5	Trees >= 3125 && Trees < 6250	REGENERATIVE 2 = +2 pts
6	Trees >= 20 && Trees < 3125	REGENERATIVE 1 = +1 pts
7	Trees < 20	NEUTRO = 0 pts

Biodiversity
Indicator to measure the level of biodiversity of trees, palm trees and other plants over 1m high

and 3cm in diameter in the regenerating area. How many different species are there in the area? Each different species is equivalent to one point and only trees and plants managed or planted by the regenerator should be counted.

Index	Description	Result
1	Biodiversity >= 160	REGENERATIVE 6 = +32 pts
2	Biodiversity >= 80 && Biodiversity < 160	REGENERATIVE 5 = +16 pts
3	Biodiversity >= 40 && Biodiversity < 80	REGENERATIVE 4 = +8 pts
4	Biodiversity >= 20 && Biodiversity < 40	REGENERATIVE 3 = +4 pts
5	Biodiversity >= 10 && Biodiversity < 20	REGENERATIVE 2 = +2 pts
6	Biodiversity >= 5 && Biodiversity < 10	REGENERATIVE 1 = +1 pts
7	Biodiversity < 5	NEUTRO = 0 pts