Sintropia Method

1937	90
Trees	Biodiversity

This report was automatically generated using Sintropia Method version 1. The goal is to measure how many tress over 1m high and 3cm of diameter there is on the regeneration area, and of how many different species.

Inspection #23
Generated on: 06/11/2025

Regenerator Data

Regenerator Address:
0xaadbB4bb9B8696870c2C8ef94447858b8a6F2117

Area size: 7.243 m²
Lat: -21.762282728232663, Lng: -48.147645744140476
Lat: -21.76188589477978, Lng: -48.14792891559756
Lat: -21.761566550782746, Lng: -48.147369778748555
Lat: -21.76162290602184, Lng: -48.14734196726633
Lat: -21.761277729675882, Lng: -48.1466795478494
Lat: -21.761524284177924, Lng: -48.14643935777386
Lat: -21.76174260311636, Lng: -48.14677081475185
Lat: -21.761639285247412, Lng: -48.1469124004804
Lat: -21.761775476968282, Lng: -48.14710455254064
Lat: -21.76188583912932, Lng: -48.147016061460164

Justification Report

Sampling radius: 5 m
Sampling area: 78.54 m²

Trees result

Ai = Inspected area
P1 = Sampling trees 1
Pn = Sampling trees n
Ap = Sampling area n
n = Number of samplings

Result = {[(P1 +...+ Pn) / n] * Ai} / Ap

Inspector report:
null

Biodiversity

coordinate
Lat:
-21.761674426068662
Lng:
-48.146688023663984

coordinate
Lat:
-21.76168119725556
Lng:
-48.14667837707585

coordinate
Lat:
-21.76168851627808
Lng:
-48.14670167148329

coordinate
Lat:
-21.76165153841442
Lng:
-48.146726487332785

coordinate
Lat:
-21.761582630759992
Lng:
-48.146728560208466

coordinate
Lat:
-21.76156124733356
Lng:
-48.14670837350343

coordinate
Lat:
-21.76155522763983
Lng:
-48.146679256072595

coordinate
Lat: -21.761533311482
Lng:
-48.14666331427616

coordinate
Lat:
-21.76155250872698
Lng:
-48.14660247555724

coordinate
Lat:
-21.761542004614505
Lng:
-48.146560921240535

coordinate
Lat:
-21.76157704093179
Lng:
-48.146512827739315

coordinate
Lat:
-21.761578431441844
Lng:
-48.14652193071874



coordinate
Lat:
-21.76148352450957
Lng:
-48.14649202637539

coordinate
Lat:
-21.76142912435379
Lng:
-48.14654321526844

coordinate
Lat:
-21.761417627450648
Lng:
-48.146560223565196

coordinate
Lat:
-21.76142649237112
Lng:
-48.1466123652765

coordinate
Lat:
-21.761451105204273

Lng:
-48.14664146437537

coordinate
Lat:
-21.761458038666458
Lng:
-48.14668779408366

coordinate
Lat:
-21.761494198203184
Lng:
-48.14672744764523

coordinate
Lat:
-21.761504234212257
Lng:
-48.14683286909297



coordinate
Lat:
-21.761517791420754
Lng:
-48.14684346380288

coordinate
Lat:
-21.761530016013207
Lng:
-48.14685896250188

coordinate
Lat:
-21.761534042021268
Lng:
-48.14688396119752

coordinate
Lat:
-21.76154011602871
Lng:
-48.14687722715664

coordinate
Lat:
-21.761557400860426
Lng:
-48.14692276067695

coordinate
Lat:
-21.76157414033789
Lng:
-48.14685476421646

coordinate
Lat: -21.7615919551712
Lng:
-48.146901932625575

coordinate
Lat:
-21.761550771146045
Lng:
-48.14693180302679

coordinate
Lat:
-21.761526394207348
Lng:
-48.14690174505594

coordinate
Lat:
-21.761497310581724
Lng:
-48.14689574025422

coordinate
Lat:
-21.761470523202917
Lng:
-48.14688632638678

coordinate
Lat:
-21.76146855333533
Lng:
-48.14689387033395



coordinate
Lat:
-21.76148922742363
Lng:
-48.14692741690654

coordinate
Lat:
-21.761509036642124
Lng:
-48.14693024970148

coordinate
Lat:
-21.761536041648874
Lng:
-48.146983609300605

coordinate
Lat:
-21.761517397404077
Lng:
-48.146967091842406



coordinate
Lat:
-21.76154701315204
Lng:
-48.147002757933166

coordinate
Lat:
-21.76156008769654
Lng:
-48.14705438155897

coordinate
Lat:
-21.76162488841429
Lng:
-48.14705985696761

coordinate
Lat:
-21.761679181939908
Lng:
-48.147095955228984



coordinate
Lat:
-21.76167522564005
Lng:
-48.147036779259246

coordinate
Lat:
-21.761669236469533
Lng:
-48.147012693736905

coordinate
Lat:
-21.76165023982148
Lng:
-48.14698225451166

coordinate
Lat:
-21.761613285089258
Lng:
-48.14697713339786

coordinate
Lat:
-21.761613122325123
Lng:
-48.14712543794358

coordinate
Lat:
-21.761586378042047
Lng:
-48.14712935655944

coordinate
Lat:
-21.761624082748472
Lng:
-48.147189364945554

coordinate
Lat:
-21.76164376724649
Lng:
-48.147169476465265

coordinate
Lat:
-21.761709409527953
Lng:
-48.14714198834092

coordinate
Lat:
-21.76171134464731
Lng:
-48.14714732741494

coordinate
Lat:
-21.761727899974243
Lng:
-48.147097131073814

coordinate
Lat:
-21.761765636375237
Lng:
-48.147098383477044



coordinate
Lat: -21.7617100543042
Lng:
-48.147017043714634

coordinate
Lat:
-21.761842944048475
Lng:
-48.14707209667744

coordinate
Lat: -21.7618575342944
Lng:
-48.14707284549534

coordinate
Lat:
-21.761870465068007
Lng:
-48.14705364055912

coordinate
Lat:
-21.761881964115403
Lng:
-48.14709138367838

coordinate
Lat:
-21.76184008552315
Lng:
-48.14711544637817



coordinate
Lat:
-21.761960051778942
Lng: -48.147157301697

coordinate
Lat:
-21.761939815291683
Lng:
-48.147120804404494

coordinate
Lat:
-21.76169070655744
Lng:
-48.14725944783406

coordinate
Lat:
-21.761691953302293
Lng:
-48.147294235818514

coordinate
Lat:
-21.761675636505103
Lng:
-48.14730809302269

coordinate
Lat:
-21.761672542299863
Lng:
-48.14729047802673

coordinate
Lat:

coordinate
Lat:

coordinate
Lat:

coordinate
Lat:

Lat:
-21.76165762370548
Lng:
-48.14729371507563

Lat:
-21.761664619895654
Lng:
-48.147315920836945

Lat:
-21.761654852705764
Lng:
-48.14730714583666

Lat:
-21.761660059240562
Lng: -48.147295211598



coordinate
Lat:
-21.76165776841206
Lng:
-48.147317068583035

coordinate
Lat:
-21.76168858430445
Lng:
-48.14729870602739

coordinate
Lat:
-21.761700596932002
Lng:
-48.147305422802084

coordinate
Lat:
-21.761678417366202
Lng:
-48.1473384590334

coordinate
Lat:
-21.76167347366157
Lng:
-48.14733660823911

coordinate
Lat:
-21.76167969228596
Lng:
-48.147347940080145

coordinate
Lat:
-21.76172297404976
Lng:
-48.14736468326265



coordinate
Lat:
-21.761731094750818
Lng:
-48.147388443309694

coordinate
Lat:
-21.761715765285572
Lng:
-48.14740810746546

coordinate
Lat:
-21.761752560873663
Lng:
-48.14738241399718

coordinate
Lat:
-21.761821400663685
Lng:
-48.14736875235857

coordinate
Lat:
-21.76183759918364
Lng:
-48.14751430290265

coordinate
Lat:
-21.761823751378266
Lng:
-48.14753801976043

coordinate
Lat:
-21.761808810772287
Lng:
-48.14755339003031

coordinate
Lat:
-21.76180322158784
Lng:
-48.147547793605675

coordinate
Lat:
-21.761853213869617
Lng:
-48.14759611790825







coordinate
Lat:
-21.761875009210097
Lng:
-48.14753147916905

coordinate
Lat:
-21.761955177347787
Lng:
-48.14775235194539

coordinate
Lat:
-21.761934834997952
Lng:
-48.14775086190352

coordinate
Lat:
-21.761949027121744
Lng:
-48.14774307271076



coordinate
Lat:
-21.762044860722064
Lng:
-48.14772960777839

coordinate
Lat:
-21.762024435404964
Lng:
-48.1476852299597

Trees

Sampling #1

31	5 m	78.54 m²
Trees	Radius	Area



coordinate
Lat:
-21.76172904531627
Lng:
-48.14737644991439



coordinate
Lat:
-21.761726084954816
Lng:
-48.14736198010818

coordinate
Lat:
-21.76174085348303
Lng:
-48.14738958031158

coordinate
Lat:
-21.761732867781443
Lng:
-48.14739401627857

coordinate
Lat:
-21.76172657795697

coordinate
Lat:
-21.761714535523364

coordinate
Lat:
-21.761709205131535

coordinate
Lat: -21.7616812147038
Lng:

Lng:
-48.14738437315053

Lng:
-48.14737519429828

Lng:
-48.147376435588946

Lng:
-48.147364224734915

coordinate
Lat:
-21.76167518045308
Lng:
-48.14735406150479

coordinate
Lat:
-21.761698491820773
Lng:
-48.14741172601436

coordinate
Lat:
-21.761697017057482
Lng:
-48.147402023444904

coordinate
Lat:
-21.761696553024166
Lng:
-48.147399500200294

coordinate
Lat:
-21.761687627063054
Lng:
-48.14739173808355

coordinate
Lat:
-21.76167024167912
Lng:
-48.147342047929754

coordinate
Lat:
-21.761701883044715
Lng:
-48.14737919609962

coordinate
Lat:
-21.76170124559555
Lng:
-48.14737767199037

coordinate
Lat:
-21.761707059863465
Lng:
-48.147380193784464

coordinate
Lat:
-21.76169444683783
Lng:
-48.14735283873755

coordinate
Lat:
-21.761718836690743
Lng:
-48.14738205010919

coordinate
Lat:
-21.761734211919272
Lng:
-48.147388620868846

coordinate
Lat:
-21.761723190031702
Lng:
-48.147390177198396

coordinate
Lat:
-21.76171784691321
Lng:
-48.14741673830586

coordinate
Lat:
-21.761718686626697
Lng:
-48.14736786201511

coordinate
Lat:
-21.76169737795857
Lng:
-48.14735243917952

coordinate
Lat:
-21.761686577024193
Lng:
-48.14735541405376

coordinate
Lat:
-21.76167235408152
Lng:
-48.147344936941494

coordinate
Lat:
-21.761672977546485
Lng:
-48.147363601979755



coordinate
Lat:
-21.761676148129702
Lng:
-48.14736459037167

coordinate
Lat:
-21.761673825467906
Lng:
-48.14738573970208

coordinate
Lat:
-21.76165474851087
Lng:
-48.14736407569484

coordinate
Lat:
-21.76168331161956
Lng:
-48.1473721437568

Sampling #2

11	5 m	78.54 m²
Trees	Radius	Area

coordinate
Lat:
-21.761703674562884
Lng:
-48.14709300397953

coordinate
Lat:
-21.761693804970818
Lng:
-48.1470912259376

coordinate
Lat:
-21.761711049650224
Lng:
-48.147092366849606



coordinate
Lat:
-21.761708710961333
Lng:
-48.147097304416455

coordinate
Lat:
-21.761702862705672
Lng:
-48.14705729908606

coordinate
Lat:
-21.76169686033254
Lng:
-48.14704334661751

coordinate
Lat:
-21.76170029236117

Lng:
-48.147031497476746

coordinate
Lat:
-21.761649681889143
Lng:
-48.1470572390723

coordinate
Lat:
-21.761638991802922
Lng:
-48.14707327346618

coordinate
Lat:
-21.76165631691903
Lng:
-48.14709322592827

coordinate
Lat:
-21.76171478416983
Lng:
-48.147065075964576

Regeneration Index

Trees

Indicator to measure the total amount of trees, palm trees and other plants over 1m high and 3cm in diameter in the regenerating area. How many trees, palm trees and other plants over 1m high and 3cm in diameter there is in the regenerating area? Justify your answer in the report.

Index	Description	Result
1	Trees >= 50000	REGENERATIVE 6 = +32 pts
2	Trees >= 25000 && Trees < 50000	REGENERATIVE 5 = +16 pts
3	Trees >= 12500 && Trees < 25000	REGENERATIVE 4 = +8 pts
4	Trees >= 6250 && Trees < 12500	REGENERATIVE 3 = +4 pts
5	Trees >= 3125 && Trees < 6250	REGENERATIVE 2 = +2 pts
6	Trees >= 20 && Trees < 3125	REGENERATIVE 1 = +1 pts
7	Trees < 20	NEUTRO = 0 pts

Biodiversity

Indicator to measure the level of biodiversity of trees, palm trees and other plants over 1m high and 3cm in diameter in the regenerating area. How many different species are there in the area? Each different species is equivalent to one point and only trees and plants managed or planted by the regenerator should be counted.

Index	Description	Result
1	Biodiversity >= 160	REGENERATIVE 6 = +32 pts
2	Biodiversity >= 80 && Biodiversity < 160	REGENERATIVE 5 = +16 pts
3	Biodiversity >= 40 && Biodiversity < 80	REGENERATIVE 4 = +8 pts
4	Biodiversity >= 20 && Biodiversity < 40	REGENERATIVE 3 = +4 pts
5	Biodiversity >= 10 && Biodiversity < 20	REGENERATIVE 2 = +2 pts
6	Biodiversity >= 5 && Biodiversity < 10	REGENERATIVE 1 = +1 pts
7	Biodiversity < 5	NEUTRO = 0 pts