Sintropia Method

2163	21
Trees	Biodiversity

This report was automatically generated using Sintropia Method version 1. The goal is to measure how many tress over 1m high and 3cm of diameter there is on the regeneration area, and of how many different species.

Inspection #31
Generated on: 06/12/2025

Regenerator Data

Regenerator Address:
0xfC201FA2Ac0908789134E3933Cc811C1f0b06E4D

Area size: 16.991 m²
Lat: -27.590530776136646, Lng: -48.84376457175733
Lat: -27.59023584486198, Lng: -48.84377160144419
Lat: -27.58991807127282, Lng: -48.843816917405206
Lat: -27.58968143991879, Lng: -48.84350662806568
Lat: -27.589223388725834, Lng: -48.843154252370226
Lat: -27.589737980206323, Lng: -48.843224234575814
Lat: -27.590195720894968, Lng: -48.842417904999365
Lat: -27.590956017568267, Lng: -48.842642229480504

Justification Report

Sampling radius: 5 m
Sampling area: 78.54 m²

Trees result

Ai = Inspected area
P1 = Sampling trees 1
Pn = Sampling trees n
Ap = Sampling area n
n = Number of samplings

Result = {[(P1 +...+ Pn) / n] * Ai} / Ap

Inspector report:
Correu tudo bem com a inspeção

Biodiversity

coordinate
Lat:
-27.59004736844826
Lng:
-48.843730681218794

coordinate
Lat:
-27.590062036658495
Lng:
-48.843724543686974

coordinate
Lat:
-27.590070205667804
Lng:
-48.843713992213836

coordinate
Lat:
-27.590006004621557
Lng:
-48.843718480869704

coordinate
Lat:
-27.590032250578787
Lng:
-48.84372491222626

coordinate
Lat:
-27.59005542109788
Lng:
-48.84361759156105

coordinate
Lat:
-27.59010097790476
Lng:
-48.84355399737096

coordinate
Lat:
-27.590079988017486
Lng:
-48.843506380192025

coordinate
Lat:
-27.59009275584839
Lng:
-48.84351382047467

coordinate
Lat:
-27.590104792311838
Lng:
-48.84350154358202

coordinate
Lat:
-27.590119677714643
Lng:
-48.843368261752424

coordinate
Lat:
-27.59013635323388
Lng:
-48.84335435444908

coordinate
Lat:
-27.590183553890707
Lng:
-48.843343749948666

coordinate
Lat:
-27.59015407468545
Lng:
-48.84334388098815

coordinate
Lat:
-27.590158652618936
Lng:
-48.8432959274537

coordinate
Lat:
-27.590285729782018
Lng:
-48.843171824811876

coordinate
Lat:
-27.590442513563424
Lng:
-48.84325417762779

coordinate
Lat:
-27.59050204841474
Lng:
-48.84306671284612



coordinate
Lat:
-27.590470612074796
Lng:
-48.84285676301052

coordinate
Lat:
-27.590467469550884
Lng:
-48.842763650069585

coordinate
Lat:
-27.59048146650039
Lng:
-48.842727598125094

Trees

Sampling #1

10	5 m	78.54 m²
Trees	Radius	Area

coordinate
Lat:
-27.59049550728435
Lng:
-48.84363656692607

coordinate
Lat:
-27.590500652304286
Lng:
-48.84363248466561

coordinate
Lat:
-27.590501087298268
Lng:
-48.843632567759855

coordinate
Lat: -27.5905033387727
Lng:
-48.84362961316251



coordinate
Lat:
-27.590499935082352
Lng:
-48.843635972197376

coordinate
Lat:
-27.590489127689413
Lng:
-48.843633962738394

coordinate
Lat:
-27.59049440889364
Lng:
-48.84362880176085

coordinate
Lat:
-27.590494536305965
Lng:
-48.84362659524598

coordinate
Lat:
-27.59048691790496
Lng:
-48.8436243184445

coordinate
Lat:
-27.590495692058397
Lng:
-48.84362078119346

Sampling #2

10	5 m	78.54 m²
Trees	Radius	Area

coordinate
Lat:
-27.589960656420406
Lng:
-48.84351408510595

coordinate
Lat:
-27.589944987743845
Lng:
-48.84352261693443

coordinate
Lat:
-27.589964324174815
Lng:
-48.8435380642917



coordinate
Lat:
-27.58995872554149
Lng:
-48.84350991346914

coordinate
Lat:
-27.589972156608535
Lng:
-48.84351453689685

coordinate
Lat:
-27.589950272502605
Lng:
-48.84357641216636

coordinate
Lat:
-27.58996283557423
Lng:
-48.843562711619036

coordinate
Lat:
-27.589946863083668
Lng:
-48.84357772793149

coordinate
Lat:
-27.589976754532653
Lng:
-48.84354810358004

coordinate
Lat:
-27.589984157170587
Lng:
-48.8435360393217

Regeneration Index

Trees

Indicator to measure the total amount of trees, palm trees and other plants over 1m high and 3cm in diameter in the regenerating area. How many trees, palm trees and other plants over 1m high and 3cm in diameter there is in the regenerating area? Justify your answer in the report.

Index	Description	Result
	Trees >= 50000	REGENERATIVE 6 = +32 pts

1		
2	Trees >= 25000 && Trees < 50000	REGENERATIVE 5 = +16 pts
3	Trees >= 12500 && Trees < 25000	REGENERATIVE 4 = +8 pts
4	Trees >= 6250 && Trees < 12500	REGENERATIVE 3 = +4 pts
5	Trees >= 3125 && Trees < 6250	REGENERATIVE 2 = +2 pts
6	Trees >= 20 && Trees < 3125	REGENERATIVE 1 = +1 pts
7	Trees < 20	NEUTRO = 0 pts

Biodiversity

Indicator to measure the level of biodiversity of trees, palm trees and other plants over 1m high and 3cm in diameter in the regenerating area. How many different species are there in the area? Each different species is equivalent to one point and only trees and plants managed or planted by the regenerator should be counted.

Index	Description	Result
1	Biodiversity >= 160	REGENERATIVE 6 = +32 pts
2	Biodiversity >= 80 && Biodiversity < 160	REGENERATIVE 5 = +16 pts
3	Biodiversity >= 40 && Biodiversity < 80	REGENERATIVE 4 = +8 pts
4	Biodiversity >= 20 && Biodiversity < 40	REGENERATIVE 3 = +4 pts
5	Biodiversity >= 10 && Biodiversity < 20	REGENERATIVE 2 = +2 pts
6	Biodiversity >= 5 && Biodiversity < 10	REGENERATIVE 1 = +1 pts
7	Biodiversity < 5	NEUTRO = 0 pts