Sintropia Method

14773	88
Trees	Biodiversity

This report was automatically generated using Sintropia Method version 1. The goal is to measure how many tress over 1m high and 3cm of diameter there is on the regeneration area, and of how many different species.

Inspection #34
Generated on: 04/12/2025

Regenerator Data

Regenerator Address:
0xCe7Dc828700D09FAE41c50b9E9949b52EbF3EA46

Area size: 165.758 m²
Lat: -27.579147614253138, Lng: -48.89176342775551
Lat: -27.58243666167801, Lng: -48.89121776297216
Lat: -27.58412100046678, Lng: -48.89101415586282
Lat: -27.58612111881024, Lng: -48.88875750923978
Lat: -27.583444259941487, Lng: -48.88851996761241
Lat: -27.58252690031604, Lng: -48.88960587125453
Lat: -27.580571833393577, Lng: -48.88955496947696
Lat: -27.57949270599603, Lng: -48.88994075220367

Justification Report

Sampling radius: 5 m
Sampling area: 78.54 m²

Trees result

Ai = Inspected area
P1 = Sampling trees 1
Pn = Sampling trees n
Ap = Sampling area n
n = Number of samplings

Result = {[(P1 +...+ Pn) / n] * Ai} / Ap

Inspector report:
Área com bastante biodiversidade, correu tudo bem com a inspeção.

Biodiversity

coordinate
Lat:
-27.583358776840367
Lng:
-48.88884508060505

coordinate
Lat:
-27.583344608495526
Lng:
-48.88882370203583

coordinate
Lat:
-27.583343430377866
Lng:
-48.88882598783875

coordinate
Lat:
-27.58331158508392
Lng:
-48.888806988647225

coordinate
Lat:
-27.583316909169632
Lng:
-48.888840587002456

coordinate
Lat:
-27.583314246853227
Lng:
-48.88889669751784

coordinate
Lat:
-27.583307477049832
Lng:
-48.88886231664505

coordinate
Lat:
-27.583336827074326
Lng:
-48.88889623139451

coordinate
Lat:
-27.58326913443868
Lng:
-48.88896099973049

coordinate
Lat:
-27.583354753835238
Lng:
-48.88895399476513

coordinate
Lat:
-27.583434854310745
Lng:
-48.88897752468819

coordinate
Lat:
-27.583671639766035
Lng:
-48.88913244478925

coordinate
Lat: -27.5836429623045
Lng:
-48.88929189238005

coordinate
Lat:
-27.583656857539133
Lng:
-48.88932558380472

coordinate
Lat:
-27.58367090818633
Lng:
-48.88933393362508

coordinate
Lat:
-27.583697512408516
Lng:
-48.88935548906946



coordinate
Lat:
-27.58369131831575
Lng:
-48.88934281405844

coordinate
Lat:
-27.583693452031056
Lng:
-48.88932836241395

coordinate
Lat:
-27.583693169718355
Lng:
-48.88933181205286

coordinate
Lat:
-27.583689712580327
Lng:
-48.88936137867479

coordinate
Lat:
-27.58371125232274
Lng:
-48.889356702263946

coordinate
Lat:
-27.583734168647723
Lng:
-48.889366071371185

coordinate
Lat:
-27.583725325213262
Lng:
-48.88934747595578

coordinate
Lat:
-27.583856520659403
Lng:
-48.88937343915989

coordinate
Lat:
-27.583858560787725
Lng:
-48.88935504892625

coordinate
Lat:
-27.583861612785768
Lng:
-48.889342010786706

coordinate
Lat:
-27.583909970959176
Lng:
-48.88942700318301

coordinate
Lat:
-27.58390906211766
Lng:
-48.889440451138846

coordinate
Lat:
-27.583800167802334
Lng:
-48.88950834055328

coordinate
Lat:
-27.58386839622117
Lng:
-48.88970347070608

coordinate
Lat:
-27.58377964275222
Lng:
-48.889711265781976

coordinate
Lat:
-27.58371194825949
Lng:
-48.8897042256304

coordinate
Lat:
-27.58371260498603
Lng:
-48.88969604743239

coordinate
Lat:
-27.58370094532021
Lng:
-48.889689695953315

coordinate
Lat:
-27.583691845147342
Lng:
-48.88972565865592

coordinate
Lat:
-27.583607383961137
Lng:
-48.88972002864736

coordinate
Lat:
-27.583566996458835
Lng:
-48.88968745422933

coordinate
Lat:
-27.583631020984367
Lng:
-48.88950968165779

coordinate
Lat:
-27.583588619821096
Lng:
-48.88942443934035



coordinate
Lat:
-27.583185581930902
Lng:
-48.889062776566064

coordinate
Lat:
-27.583173072797226
Lng:
-48.88925290768872



coordinate
Lat:
-27.583167439422454
Lng:
-48.88925341448358

coordinate
Lat:
-27.583099775202395
Lng:
-48.88938973593808

coordinate
Lat:
-27.58309128206369
Lng:
-48.88940297532365



coordinate
Lat:
-27.583075234631888
Lng:
-48.889514942811395

coordinate
Lat:
-27.583101913138474
Lng:
-48.889522317016784

coordinate
Lat:
-27.581308102260884
Lng:
-48.890609135896796

coordinate
Lat:
-27.581327374414453
Lng:
-48.890559472062506

coordinate
Lat:
-27.581345336963768
Lng:
-48.89055789624892

coordinate
Lat:
-27.581300147615714
Lng:
-48.89054322734348

coordinate
Lat:
-27.581296023471953
Lng:
-48.89052547031775

coordinate
Lat:
-27.58109335790163
Lng:
-48.8906329405018

coordinate
Lat:
-27.581226192480933
Lng:
-48.89058966868598

coordinate
Lat:
-27.580985508583886
Lng:
-48.89061290794994

coordinate
Lat:
-27.580969794033013
Lng:
-48.890593532397666

coordinate
Lat:
-27.580878655439907
Lng:
-48.89057016004705

coordinate
Lat:
-27.58088025427969
Lng:
-48.890381835947856

coordinate
Lat:
-27.58089059888638
Lng:
-48.89026262860613

coordinate
Lat:
-27.58086598151766
Lng:
-48.89019496783503

coordinate
Lat: -27.5808964647225
Lng:
-48.890195517032865

coordinate
Lat:
-27.580945865787626
Lng:
-48.89025643033991

coordinate
Lat:
-27.580962744165372
Lng:
-48.89013831563923

coordinate
Lat:
-27.580974440090888
Lng:
-48.89011174582029

coordinate
Lat: -27.5809801662644
Lng:
-48.890015004663844

coordinate
Lat:
-27.580935062527477
Lng:
-48.890008328972556

coordinate
Lat:
-27.580775530211852
Lng:
-48.890014726251835

coordinate
Lat:
-27.580764496776776
Lng:
-48.890032712990596

coordinate
Lat:
-27.58072103061546
Lng:
-48.89000637158436

coordinate
Lat:
-27.580710405777086
Lng:
-48.89000573249814

coordinate
Lat:
-27.580662171733525
Lng:
-48.89002220907584



coordinate
Lat:
-27.580515413289433
Lng:
-48.8899949716654

coordinate
Lat: -27.5805223726304
Lng:
-48.890026853202826

coordinate
Lat:
-27.58057711647331

coordinate
Lat:
-27.580639877864215

coordinate
Lat:
-27.58063896448845

coordinate
Lat:

-27.580577116473 31
Lng:
-48.89008099217794

-27.580639877864215
Lng:
-48.89008613283168

-27.580638904484 5
Lng:
-48.89008662112069

-27.580703594028815
Lng: -48.890119366361

coordinate
Lat:
-27.580689304302105
Lng:
-48.890182056060034

coordinate
Lat:
-27.580681061481044
Lng:
-48.89020921381445

coordinate
Lat:
-27.580694352611008
Lng:
-48.89020750777735

coordinate
Lat:
-27.58058097248367
Lng:
-48.89047737239765

coordinate
Lat:
-27.580621411159825
Lng:
-48.89048204402839

coordinate
Lat: -27.5806496129401
Lng:
-48.89055667014993

coordinate
Lat:
-27.580683033355985
Lng:
-48.89056066469902



coordinate
Lat:
-27.580846122102393
Lng:
-48.89063825040356

coordinate
Lat:
-27.58087798498196
Lng:
-48.890691797501084

coordinate
Lat:
-27.580757746851944
Lng:
-48.890658421526815

coordinate
Lat:
-27.580866982220314
Lng:
-48.89072422215276

coordinate
Lat:
-27.580935091763163
Lng:
-48.8907582799278

Trees

Sampling #1

1	5 m	78.54 m²
Trees	Radius	Area

coordinate
Lat:
-27.58479018257437
Lng:
-48.8892030787206

Sampling #2

8	5 m	78.54 m²
Trees	Radius	Area

coordinate
Lat:
-27.580994895167386
Lng:
-48.89052741309156

coordinate
Lat:
-27.58099159081592
Lng:
-48.890525579896035

coordinate
Lat:
-27.58098799997015
Lng:
-48.89052118991421

coordinate
Lat:
-27.580974927097436
Lng:
-48.8905108394297

coordinate
Lat:
-27.58099079723648
Lng:
-48.890497190491445

coordinate
Lat:
-27.580997725771937
Lng:
-48.89052383557267

coordinate
Lat:
-27.58098770193281
Lng:
-48.89055578130548

coordinate
Lat:
-27.580980739944806
Lng: -48.890563471644

Sampling #3

12	5 m	78.54 m²
Trees	Radius	Area

coordinate
Lat:
-27.581031073784903
Lng:
-48.8903118560053

coordinate
Lat:
-27.581015171693508
Lng:
-48.89028663491012

coordinate
Lat:
-27.580998296212293
Lng:
-48.89029445977236

coordinate
Lat:
-27.580997246849186
Lng:
-48.89031440904359

coordinate
Lat:
-27.580995248138876
Lng:
-48.890312696644415

coordinate
Lat:
-27.58099281022769
Lng:
-48.89032284609353

coordinate
Lat:
-27.580998603671347
Lng:
-48.8903360251741

coordinate
Lat:
-27.580994334606928
Lng:
-48.89033679219388

coordinate
Lat:
-27.581001322583116
Lng:
-48.89033416677678

coordinate
Lat:
-27.580990656381015
Lng:
-48.89036913364569



coordinate
Lat:
-27.581011018309017
Lng:
-48.89036445425723

coordinate
Lat:
-27.581037110990252
Lng:
-48.89035343163823

Regeneration Index

Trees

Indicator to measure the total amount of trees, palm trees and other plants over 1m high and 3cm in diameter in the regenerating area. How many trees, palm trees and other plants over 1m high and 3cm in diameter there is in the regenerating area? Justify your answer in the report.

Index	Description	Result
	Trees >= 50000	REGENERATIVE 6 = +32 pts

1		
2	Trees >= 25000 && Trees < 50000	REGENERATIVE 5 = +16 pts
3	Trees >= 12500 && Trees < 25000	REGENERATIVE 4 = +8 pts
4	Trees >= 6250 && Trees < 12500	REGENERATIVE 3 = +4 pts
5	Trees >= 3125 && Trees < 6250	REGENERATIVE 2 = +2 pts
6	Trees >= 20 && Trees < 3125	REGENERATIVE 1 = +1 pts
7	Trees < 20	NEUTRO = 0 pts

Biodiversity

Indicator to measure the level of biodiversity of trees, palm trees and other plants over 1m high and 3cm in diameter in the regenerating area. How many different species are there in the area? Each different species is equivalent to one point and only trees and plants managed or planted by the regenerator should be counted.

Index	Description	Result
1	Biodiversity >= 160	REGENERATIVE 6 = +32 pts
2	Biodiversity >= 80 && Biodiversity < 160	REGENERATIVE 5 = +16 pts
3	Biodiversity >= 40 && Biodiversity < 80	REGENERATIVE 4 = +8 pts
4	Biodiversity >= 20 && Biodiversity < 40	REGENERATIVE 3 = +4 pts
5	Biodiversity >= 10 && Biodiversity < 20	REGENERATIVE 2 = +2 pts
6	Biodiversity >= 5 && Biodiversity < 10	REGENERATIVE 1 = +1 pts
7	Biodiversity < 5	NEUTRO = 0 pts