Sintropia Method

277	45
Trees	Biodiversity

This report was automatically generated using Sintropia Method version 1. The goal is to measure how many tress over 1m high and 3cm of diameter there is on the regeneration area, and of how many different species.

Inspection #37
Generated on: 07/12/2025

Regenerator Data

Regenerator Address:
0x9087651932301A0fDE01997df67BE1e3582ba3Fc

Area size: 28.032 m²
Lat: -27.961094953511612, Lng: -48.758141164502774
Lat: -27.96110111038179, Lng: -48.758169717607956
Lat: -27.96117910732933, Lng: -48.757554585319895
Lat: -27.96073602421138, Lng: -48.75651657701627
Lat: -27.959752234556447, Lng: -48.756234853578746
Lat: -27.95963134614597, Lng: -48.757534616437624
Lat: -27.96017241498086, Lng: -48.757875004440734

Justification Report

Inspector report:
Correu tudo bem com a inspeção

Biodiversity

coordinate
Lat:
-27.96054701789092
Lng:
-48.75758439306985

coordinate
Lat:
-27.960162288523097
Lng:
-48.757100421980724

coordinate
Lat:
-27.960161430723147
Lng:
-48.757096037899274

coordinate
Lat:
-27.960172498360272
Lng:
-48.7571058596955

coordinate
Lat:
-27.960136071312135
Lng:
-48.757096483827176

coordinate
Lat:
-27.960081799041358
Lng:
-48.75706629871508

coordinate
Lat:
-27.960048665570294
Lng:
-48.75705536237195

coordinate
Lat:
-27.96004348475584
Lng:
-48.75705269844074

coordinate
Lat:
-27.960020099736603
Lng:
-48.757073195623526

coordinate
Lat:
-27.960045505488093
Lng:
-48.75709501558265

coordinate
Lat:
-27.960062392734383
Lng:
-48.757117353559345

coordinate
Lat:
-27.960084414605795
Lng:
-48.75711529909744

coordinate
Lat:
-27.96009871565468
Lng:
-48.75716421749792

coordinate
Lat:
-27.960019442846733
Lng:
-48.75712153063091

coordinate
Lat:
-27.960110461387266
Lng:
-48.757215494379786

coordinate
Lat:
-27.959976372935717
Lng:
-48.75727980581767

coordinate
Lat:
-27.96001015890458
Lng:
-48.757484692920166

coordinate
Lat:
-27.960106036747288
Lng:
-48.757515186744016

coordinate
Lat:
-27.960119247493264
Lng:
-48.75760804518812

coordinate
Lat:
-27.96013180662014
Lng:
-48.757593547769005





coordinate
Lat:
-27.96010927319722
Lng:
-48.75763848619892

coordinate
Lat:
-27.960087027894975
Lng:
-48.75765907437708



coordinate
Lat:
-27.96009379953941 5
Lng:
-48.75768851987982

coordinate
Lat:
-27.96009891109953
Lng:
-48.75771633002966

coordinate
Lat:
-27.960115590955795
Lng:
-48.75776182935469

coordinate
Lat:
-27.96013151046219
Lng:
-48.757762724196176

coordinate
Lat:
-27.96021769197609
Lng:
-48.757088582358215

coordinate
Lat:
-27.960249162603876
Lng:
-48.75744193755126

coordinate
Lat:
-27.960735286270655
Lng:
-48.7576446379217

coordinate
Lat:
-27.96078666273303
Lng:
-48.75760585086499

coordinate
Lat:
-27.960795664365484
Lng:
-48.757722427193414

coordinate
Lat:
-27.960783485654638
Lng:
-48.75776734219019

coordinate
Lat:
-27.96071381769482
Lng:
-48.75775561996383

coordinate
Lat:
-27.960781543438696
Lng:
-48.75788190755542

coordinate
Lat:
-27.960875143093002
Lng:
-48.75795424637216

coordinate
Lat:
-27.96087771487481
Lng:
-48.75797894785522

coordinate
Lat:
-27.960863987909377
Lng:
-48.758004555621405

coordinate
Lat:
-27.96086155092683
Lng:
-48.758037442577034

coordinate
Lat:
-27.960900553029134
Lng:
-48.757981095087395

coordinate
Lat:
-27.96094319870037
Lng:
-48.75802734568656



coordinate
Lat:
-27.960979486509075
Lng:
-48.7580753651396

coordinate
Lat:
-27.961021328764396
Lng:
-48.75803608662151

coordinate
Lat:
-27.96103709048641
Lng:
-48.757939396814315

coordinate
Lat:
-27.96101023070356
Lng:
-48.75784067546115

coordinate
Lat:
-27.96108005779308
Lng:
-48.75768647043386

Trees

coordinate
Lat:
-27.96086628819819
Lng:
-48.757712272904065

coordinate
Lat:
-27.96054701789092
Lng:
-48.75758439306985

coordinate
Lat:
-27.960308392886244
Lng:
-48.75747518604123

coordinate
Lat:
-27.960169154601274
Lng:
-48.757093308086624

coordinate
Lat:
-27.960162288523097
Lng:
-48.757100421980724

coordinate
Lat:
-27.960161430723147
Lng:
-48.757096037899274

coordinate
Lat:
-27.960172498360272
Lng:
-48.7571058596955

coordinate
Lat:
-27.960168777857298
Lng:
-48.7571250671758

coordinate

coordinate

coordinate

coordinate

Lat:
-27.960136071312135
Lng:
-48.757096483827176

Lat:
-27.960127012289195
Lng:
-48.757087782853624

Lat:
-27.96011153863274
Lng:
-48.75708319254475

Lat:
-27.960099257902534
Lng:
-48.75707771887676

coordinate
Lat:
-27.960093779813956
Lng:
-48.757070119473084

coordinate
Lat:
-27.960086454081786
Lng:
-48.75707038821493

coordinate
Lat:
-27.960081799041358
Lng:
-48.75706629871508

coordinate
Lat:
-27.960070530569986
Lng:
-48.75706462996063

coordinate
Lat:
-27.960068340813663
Lng:
-48.75706369203594

coordinate
Lat:
-27.96005986585061
Lng:
-48.75706919434145

coordinate
Lat:
-27.960048665570294
Lng:
-48.75705536237195

coordinate
Lat:
-27.96004348475584
Lng:
-48.75705269844074

coordinate
Lat:
-27.960043467949774
Lng:
-48.75706587282998

coordinate
Lat:
-27.96002876694041
Lng:
-48.757054706180476

coordinate
Lat:
-27.959995383434524
Lng:
-48.757060091717506

coordinate
Lat:
-27.960006564764566
Lng:
-48.75707288401229

coordinate
Lat:
-27.960020099736603
Lng:
-48.757073195623526

coordinate
Lat:
-27.960018064315722
Lng:
-48.75707781215966

coordinate
Lat:
-27.960019969325465
Lng:
-48.75709267167099

coordinate
Lat:
-27.960023733323688
Lng:
-48.757100248992444

coordinate
Lat:
-27.96002732456448
Lng:
-48.75709865983539

coordinate
Lat:
-27.960034267401266
Lng:
-48.757094749230426

coordinate
Lat:
-27.960045505488093
Lng:
-48.75709501558265

coordinate
Lat:
-27.96005042715936
Lng:
-48.75710671713637

coordinate
Lat:
-27.96005174276793
Lng:
-48.75711053118015

coordinate
Lat:
-27.960062392734383
Lng:
-48.757117353559345

coordinate
Lat:
-27.960069470509314
Lng:
-48.7571130754434

coordinate
Lat:
-27.960084414605795
Lng:
-48.75711529909744

coordinate
Lat:
-27.96008873445171
Lng:
-48.75711842878861

coordinate
Lat:
-27.96011378798203
Lng:
-48.7571286692386

coordinate
Lat:
-27.96013544805684
Lng:
-48.75713920272267

coordinate
Lat:
-27.96014763205155
Lng:
-48.7571451407127

coordinate
Lat:
-27.960141381394184
Lng:
-48.757147207151604

coordinate
Lat:
-27.96015590879417
Lng:
-48.75715436781398

coordinate
Lat:
-27.960161571572026
Lng:
-48.75715686220331

coordinate
Lat:
-27.960177892946067
Lng:
-48.7571571011792

coordinate
Lat:
-27.960158411373737
Lng:
-48.75718946953589

coordinate
Lat:
-27.960144699697715
Lng:
-48.75718291283487

coordinate
Lat:
-27.960141094097438
Lng:
-48.75718356827114

coordinate
Lat:
-27.96013858734755
Lng:
-48.75718374528183

coordinate
Lat:
-27.960128979719673
Lng:
-48.75718430311508

coordinate
Lat:
-27.960127415687133
Lng:
-48.75718446004174

coordinate
Lat:
-27.960124452217375
Lng:
-48.75718353688897

coordinate
Lat:
-27.960111296453427
Lng:
-48.7571752682259

coordinate
Lat:
-27.960105418042343
Lng:
-48.757174141692936

coordinate
Lat:
-27.960096849356667
Lng:
-48.757163302268374

coordinate
Lat:
-27.96009871565468
Lng:
-48.75716421749792

coordinate
Lat:
-27.960083199291212
Lng:
-48.75715857095139

coordinate
Lat:
-27.96007510633616
Lng:
-48.75714941162384

coordinate
Lat:
-27.960060788925748
Lng:
-48.75714608316338

coordinate
Lat:
-27.960062572015822
Lng:
-48.75714412409348

coordinate
Lat:
-27.960060195354995
Lng:
-48.75714316321522

coordinate
Lat:
-27.960046600043064
Lng:
-48.75713109806934

coordinate
Lat:
-27.96003663510228
Lng:
-48.75712457571575

coordinate
Lat:
-27.960035201400697
Lng:
-48.757127632925545

coordinate
Lat:
-27.960019442846733
Lng:
-48.75712153063091

coordinate
Lat:
-27.960013774970243
Lng:
-48.75712125285419

coordinate
Lat:
-27.959996554384052
Lng:
-48.7571154607181

coordinate
Lat:
-27.959995703590696
Lng:
-48.757115532417515

coordinate
Lat:
-27.95998463806682
Lng:
-48.75714862829485

coordinate
Lat:
-27.95998347260919
Lng:
-48.757146725371896

coordinate
Lat:
-27.959986242267803
Lng:
-48.757145177817264

coordinate
Lat:
-27.959990576548797
Lng:
-48.75714577632772

coordinate
Lat:
-27.959994202063577
Lng:
-48.75714949831867

coordinate
Lat:
-27.95999630595176
Lng:
-48.757150413010024

coordinate
Lat:
-27.96000483910669
Lng:
-48.75715571607444

coordinate
Lat:
-27.96001205017378
Lng:
-48.75715748089317

coordinate
Lat:
-27.96001687141088
Lng:
-48.757163162207895

coordinate
Lat:
-27.96003210136326
Lng:
-48.75716484001438

coordinate
Lat:
-27.960029418756115
Lng:
-48.75716218103699

coordinate
Lat:
-27.960034473324768
Lng:
-48.757168478537885

coordinate
Lat:
-27.960036682856856
Lng:
-48.757166212338355

coordinate
Lat:
-27.960038228968624
Lng:
-48.757161974602084

coordinate
Lat: -27.9600453477939
Lng:
-48.75717574943054

coordinate
Lat:
-27.960056212452148
Lng:
-48.757187523999704

coordinate
Lat:
-27.96005988229175
Lng:
-48.75718757584041

coordinate
Lat:
-27.960057151788277
Lng:
-48.757183164913044

coordinate
Lat:
-27.96004706354074
Lng:
-48.7571855870564

coordinate
Lat:
-27.96004786451758
Lng:
-48.75720049179144

coordinate
Lat:
-27.960049684743428
Lng:
-48.75720563736464

coordinate
Lat:
-27.960061437341995
Lng:
-48.757202106355145

coordinate
Lat:
-27.960063566432506
Lng:
-48.757204494412996

coordinate
Lat:
-27.960070405723542
Lng:
-48.75720894834104

coordinate
Lat:
-27.96007560509522
Lng:
-48.75720987149474

coordinate
Lat:
-27.96009163568634
Lng:
-48.75720914787252

coordinate
Lat:
-27.96009419382358
Lng:
-48.75720856843683

coordinate
Lat:
-27.960110461387266
Lng:
-48.757215494379786

coordinate
Lat:
-27.960107714383284
Lng:
-48.75720944482618

coordinate
Lat:
-27.96012420683677
Lng:
-48.75722241962981

coordinate
Lat:
-27.960119852229575
Lng:
-48.75721746525333

coordinate
Lat:
-27.960123551734604
Lng:
-48.75722854553597

coordinate
Lat:
-27.960123414127278
Lng:
-48.757235606667855

coordinate
Lat:
-27.96013931692981
Lng:
-48.757246469347116

coordinate
Lat:
-27.960143559973837
Lng:
-48.757265815106884

coordinate
Lat:
-27.960134171572506
Lng:
-48.757276480762165

coordinate
Lat:
-27.96015096939579
Lng:
-48.757282440422614

coordinate
Lat:
-27.960108591826543

coordinate
Lat:
-27.960081089652828

coordinate
Lat:
-27.960062326376327

coordinate
Lat:
-27.96005804314391

Lng:
-48.75733072903332

Lng:
-48.75733607454296

Lng:
-48.75731818916752

Lng:
-48.757317148778704

coordinate
Lat:
-27.960039470991187
Lng:
-48.75730860865096

coordinate
Lat:
-27.96002246638983
Lng:
-48.75729774266183



coordinate
Lat:
-27.960005844902362
Lng:
-48.757293245139536

coordinate
Lat:
-27.959988361822525
Lng:
-48.75728835643643

coordinate
Lat:
-27.959976372935717
Lng:
-48.75727980581767

coordinate
Lat:
-27.959968289364546
Lng:
-48.757276464830085

coordinate
Lat:
-27.95996180836089
Lng:
-48.75727202256911

coordinate
Lat:
-27.95996173145793
Lng:
-48.7572720566225

coordinate
Lat:
-27.960064803342863
Lng:
-48.75747747309213

coordinate
Lat:
-27.960041704374024
Lng:
-48.75748260613026

coordinate
Lat:
-27.960018894432658
Lng:
-48.75748148076279

coordinate
Lat:
-27.96001015890458
Lng:
-48.757484692920166

coordinate
Lat:
-27.960024948003525
Lng:
-48.75748547077352

coordinate
Lat:
-27.960091456485138
Lng:
-48.75751386654434

coordinate
Lat:
-27.960106036747288
Lng:
-48.757515186744016

coordinate
Lat:
-27.960117735527042
Lng:
-48.757512158111844

coordinate

coordinate

coordinate



coordinate

coordinate
Lat:
-27.960117077072965
Lng:
-48.75755334507753

coordinate
Lat:
-27.96011375064495
Lng:
-48.75757415900634

coordinate
Lat:
-27.960113387175408
Lng:
-48.75759947027184

coordinate
Lat:
-27.960119247493264
Lng:
-48.75760804518812

coordinate
Lat:
-27.96013180662014
Lng:
-48.757593547769005

coordinate
Lat:
-27.960130434722927
Lng:
-48.75759751270714

coordinate
Lat:
-27.96010927319722
Lng:
-48.75763848619892

coordinate
Lat:
-27.960087027894975
Lng:
-48.75765907437708

coordinate
Lat:
-27.960093799539415
Lng:
-48.75768851987982

coordinate
Lat:
-27.96009891109953
Lng:
-48.75771633002966

coordinate
Lat:
-27.960106815651837
Lng:
-48.75772625111149

coordinate
Lat:
-27.960106062503154
Lng:
-48.75772305827697



coordinate
Lat:
-27.960110615577676
Lng:
-48.75775797651814

coordinate
Lat:
-27.960115590955795
Lng:
-48.75776182935469

coordinate
Lat:
-27.960116148375537
Lng:
-48.75775995017868

coordinate
Lat:
-27.96013151046219
Lng:
-48.757762724196176

coordinate
Lat:
-27.96013644407537
Lng:
-48.75776396138763

coordinate
Lat:
-27.960144500668324
Lng:
-48.75778445793932

coordinate
Lat:
-27.960149511466696
Lng:
-48.75778068786951

coordinate
Lat:
-27.960164208467404
Lng:
-48.757776574649874



coordinate
Lat:
-27.96017063625479
Lng:
-48.75777811357667

coordinate
Lat:
-27.959760820524064
Lng:
-48.757615973920004

coordinate
Lat:
-27.95992738822744
Lng:
-48.7576583212627

coordinate
Lat:
-27.960075451888844
Lng:
-48.75737110573617

coordinate
Lat:
-27.96012394832505
Lng:
-48.75732639207893



coordinate
Lat:
-27.960129400867796
Lng:
-48.75731861359904

coordinate
Lat:
-27.96021769197609
Lng:
-48.757088582358215



coordinate
Lat:
-27.960205245519866
Lng:
-48.75702928545063

coordinate
Lat:
-27.960238219468152
Lng:
-48.7569588560529

coordinate
Lat:
-27.960257442300286
Lng:
-48.75689802132875

coordinate
Lat:
-27.960253589820383
Lng:
-48.75690155016917

coordinate
Lat:
-27.960296650443187
Lng:
-48.7568701711006

coordinate
Lat:
-27.960307085912635
Lng:
-48.756863465578064

coordinate
Lat:
-27.96030729787176
Lng:
-48.756835668003525

coordinate
Lat:
-27.96031086151938
Lng:
-48.756806745602624

coordinate
Lat:
-27.960320729991768
Lng:
-48.75677354953764

coordinate
Lat:
-27.960227854438028
Lng:
-48.7572499387209

coordinate
Lat:
-27.96025801713786
Lng:
-48.75722573798195

coordinate
Lat:
-27.960261991261323
Lng:
-48.757215002597086

coordinate
Lat:
-27.960279188144526
Lng:
-48.75721992894233



coordinate
Lat:
-27.960290828956598
Lng:
-48.757231332040746

coordinate
Lat:
-27.960293177433865
Lng:
-48.75723172965971

coordinate
Lat:
-27.96026800724352
Lng:
-48.75723987444375

coordinate
Lat:
-27.96026884736312
Lng:
-48.757262703614515

coordinate
Lat:
-27.960272974652703
Lng:
-48.75728199955821

coordinate
Lat:
-27.96027682735175
Lng:
-48.757290668699916

coordinate
Lat:
-27.960279574777676
Lng:
-48.75729818320463

coordinate
Lat:
-27.960281979591155
Lng:
-48.75729986442809

coordinate
Lat:
-27.96030042033205
Lng:
-48.75732863458041



coordinate
Lat:
-27.96030363456675
Lng:
-48.75732641972978

coordinate
Lat:
-27.960304134247032
Lng:
-48.75733786596763

coordinate
Lat:
-27.960287144480347
Lng:
-48.75734884882671



coordinate
Lat:
-27.960289074689015
Lng:
-48.75735480483688

coordinate
Lat:
-27.960285169332682
Lng:
-48.757358313539314

coordinate
Lat: -27.9602632248263
Lng:
-48.75738186641408

coordinate
Lat:
-27.96025180546655
Lng:
-48.7573980965445

coordinate
Lat:
-27.960235774811025
Lng:

-48.75741751844122

coordinate
Lat:
-27.960249162603876
Lng:

-48.75744193755126

coordinate
Lat:
-27.960238186668565
Lng:

-48.75746042472194

coordinate
Lat:
-27.96023751611631
Lng:

-48.75747023154865

coordinate
Lat:
-27.96065928622515
Lng:
-48.75760681371126

coordinate
Lat:
-27.96069002683195
Lng:
-48.757633413620546

coordinate
Lat: -27.9607095203069
Lng:
-48.7576446897455

coordinate
Lat:
-27.960708232233227
Lng:
-48.75764415033807

coordinate
Lat:
-27.960735286270655
Lng:
-48.7576446379217

coordinate
Lat:
-27.960747841118284
Lng:
-48.75763250194188

coordinate
Lat:
-27.96078666273303
Lng:
-48.75760585086499

coordinate
Lat:
-27.960786186216573
Lng:
-48.75759655742195

coordinate
Lat:
-27.960815514146695
Lng: -48.757543140035

coordinate
Lat:
-27.960853010820323
Lng:
-48.75747171055239

coordinate
Lat:
-27.960797860569922
Lng:
-48.75770025487162

coordinate
Lat:
-27.960795664365484
Lng:
-48.757722427193414

coordinate
Lat:
-27.960775453798203
Lng:
-48.75774179279822

coordinate
Lat:
-27.960783485654638
Lng:
-48.75776734219019

coordinate
Lat:
-27.960792391701727
Lng:
-48.757775294869596

coordinate
Lat:
-27.960752403447973
Lng:
-48.75775138990381

coordinate
Lat:
-27.96071141456894
Lng:

coordinate
Lat:
-27.960709802615977
Lng:

coordinate
Lat:
-27.96071381769482
Lng:

coordinate
Lat:
-27.96071779660532
Lng:

Lng:
-48.75773159379189

Lng:
-48.757733879557655

Lng:
-48.75775561996383

Lng:
-48.757754093766195

coordinate
Lat:
-27.96070061468737
Lng:
-48.7577649939207

coordinate
Lat:
-27.960691389585545
Lng:
-48.75775603981757

coordinate
Lat:
-27.960694979438383
Lng:
-48.75778520827986

coordinate
Lat:
-27.96069268104781
Lng:
-48.75778651700964

coordinate
Lat:
-27.96069289648134
Lng:
-48.75779219564862

coordinate
Lat:
-27.960698952486037
Lng:
-48.75779979548991

coordinate
Lat:
-27.960715082034536
Lng:
-48.75779843231109

coordinate
Lat:
-27.96076405297907
Lng:
-48.75778850594187

coordinate
Lat:
-27.960768313028332
Lng:
-48.75783123737365

coordinate
Lat:
-27.960781543438696
Lng:
-48.75788190755542

coordinate
Lat:
-27.96078890490023
Lng:
-48.757886954171674

coordinate
Lat:
-27.960833320514933
Lng:
-48.7579116245124

coordinate
Lat:
-27.960861002425254
Lng:
-48.757919621793235



coordinate
Lat:
-27.96087443179126
Lng:
-48.75793141657901

coordinate
Lat:
-27.960875143093002
Lng:
-48.75795424637216

coordinate
Lat:
-27.96087771487481
Lng:
-48.75797894785522

coordinate

coordinate

coordinate

coordinate

Lat:
-27.96086969096246
Lng: -48.757988858447

Lat:
-27.960863987909377
Lng:
-48.758004555621405

Lat:
-27.960855879494925
Lng:
-48.75799833862952

Lat:
-27.96086155092683
Lng:
-48.758037442577034

coordinate
Lat:
-27.960850747722443
Lng:
-48.75803274627456

coordinate
Lat:
-27.960900553029134
Lng:
-48.757981095087395

coordinate
Lat:
-27.96094319870037
Lng:
-48.75802734568656

coordinate
Lat:
-27.96094029032898
Lng:
-48.75804522895208

coordinate
Lat:
-27.960960349499953
Lng:
-48.75802696785431

coordinate
Lat:
-27.960962160209807
Lng:
-48.75802945877462

coordinate
Lat:
-27.96096968444279
Lng:
-48.758052610850505

coordinate
Lat:
-27.960979486509075
Lng:
-48.7580753651396

coordinate
Lat:
-27.960990377273486
Lng:
-48.75807364175444

coordinate
Lat:
-27.961039005916284
Lng:
-48.75808733543669

coordinate
Lat:
-27.961026273516904
Lng:
-48.75805614355387

coordinate
Lat:
-27.961021983773275
Lng:
-48.758045331465695

coordinate
Lat:
-27.961021328764396
Lng:
-48.75803608662151

coordinate
Lat:
-27.961022531812215
Lng:
-48.75802713434738

coordinate
Lat:
-27.961026375512784
Lng:
-48.758008323593835

coordinate
Lat:
-27.96102406665506
Lng:
-48.75799865324058

coordinate
Lat:
-27.96102097687495
Lng:
-48.75799713126793

coordinate
Lat: -27.9610178336729
Lng:
-48.7579889067589

coordinate
Lat:
-27.961031022398007
Lng:
-48.757966810423085

coordinate
Lat:
-27.961032188129742
Lng:
-48.75796452963643

coordinate
Lat:
-27.96103612349094
Lng:
-48.75793911031647

coordinate
Lat:
-27.961036917671557
Lng:
-48.75793847437435

coordinate
Lat:
-27.96103709048641
Lng:
-48.757939396814315

coordinate
Lat:
-27.961033955775157
Lng:
-48.757930837692115

coordinate
Lat:
-27.96102288863674
Lng: -48.757940209944

coordinate
Lat:
-27.961031307479686
Lng:
-48.75791114141817

coordinate
Lat:
-27.96103724801541
Lng:
-48.757901823623726

coordinate
Lat:
-27.961033145005473
Lng:
-48.75789800628255

coordinate
Lat:
-27.961023950405284
Lng:
-48.757888341422316

coordinate
Lat:
-27.961008774850097
Lng:
-48.75785628755587

coordinate
Lat:
-27.961008455938543
Lng:
-48.75784782487131

coordinate
Lat:
-27.961010486253667
Lng:
-48.75784938301048

coordinate
Lat:
-27.96101023070356
Lng:
-48.75784067546115

coordinate
Lat:
-27.96101782386004
Lng:
-48.75783822768625

coordinate
Lat:
-27.96101788397007
Lng:
-48.75781849432338

coordinate
Lat:
-27.961020796181487
Lng:
-48.75781773865459

coordinate
Lat:
-27.96101616177669
Lng:
-48.757790906411536

coordinate
Lat:
-27.961018075074662
Lng:
-48.75778975661095

coordinate
Lat:
-27.961020035438786
Lng:
-48.75776225270679

coordinate
Lat:
-27.96102896922065
Lng:
-48.757767740884695

coordinate
Lat:
-27.961032793413306
Lng:
-48.757760477231486

coordinate
Lat:
-27.961028456834352
Lng:
-48.75775988236654

coordinate
Lat:
-27.961034299780774
Lng:
-48.75776233238043

coordinate
Lat:
-27.961031012212803
Lng:
-48.757757787215155

coordinate
Lat:
-27.961038486517108
Lng:
-48.75775391509846

coordinate
Lat:
-27.961043453607665
Lng:
-48.75774986373884



coordinate
Lat:
-27.961051957410152
Lng:
-48.75771223785316

coordinate
Lat:
-27.961066111862475
Lng:
-48.75769872597419

coordinate
Lat:
-27.96108005779308
Lng:
-48.75768647043386

coordinate
Lat:
-27.96106974329456
Lng:
-48.7576882199296

coordinate
Lat:
-27.961075100499833
Lng:
-48.75768597014506

coordinate
Lat:
-27.961084972522148
Lng:
-48.75766196238488

coordinate
Lat:
-27.96095548976204
Lng:
-48.757770625244014

Regeneration Index

Trees

Indicator to measure the total amount of trees, palm trees and other plants over 1m high and 3cm in diameter in the regenerating area. How many trees, palm trees and other plants over 1m high and 3cm in diameter there is in the regenerating area? Justify your answer in the report.

Index	Description	Result
1	Trees >= 50000	REGENERATIVE 6 = +32 pts
2	Trees >= 25000 && Trees < 50000	REGENERATIVE 5 = +16 pts
3	Trees >= 12500 && Trees < 25000	REGENERATIVE 4 = +8 pts
4	Trees >= 6250 && Trees < 12500	REGENERATIVE 3 = +4 pts
5	Trees >= 3125 && Trees < 6250	REGENERATIVE 2 = +2 pts
6	Trees >= 20 && Trees < 3125	REGENERATIVE 1 = +1 pts
7	Trees < 20	NEUTRO = 0 pts

Biodiversity

Indicator to measure the level of biodiversity of trees, palm trees and other plants over 1m high and 3cm in diameter in the regenerating area. How many different species are there in the area? Each different species is equivalent to one point and only trees and plants managed or planted by the regenerator should be counted.

Index	Description	Result
1	Biodiversity >= 160	REGENERATIVE 6 = +32 pts
2	Biodiversity >= 80 && Biodiversity < 160	REGENERATIVE 5 = +16 pts
3	Biodiversity >= 40 && Biodiversity < 80	REGENERATIVE 4 = +8 pts
4	Biodiversity >= 20 && Biodiversity < 40	REGENERATIVE 3 = +4 pts
5	Biodiversity >= 10 && Biodiversity < 20	REGENERATIVE 2 = +2 pts
6	Biodiversity >= 5 && Biodiversity < 10	REGENERATIVE 1 = +1 pts
7	Biodiversity < 5	NEUTRO = 0 pts