Sintropia Method

| 9553 | 80 |
|---|---|
| Trees | Biodiversity |

This report was automatically generated using Sintropia Method version 1. The goal is to measure how many tress over 1m high and 3cm of diameter there is on the regeneration area, and of how many different species.

**Inspection #38**
Generated on: 11/12/2025

# Regenerator Data

**Regenerator Address:**
0x379c826182cD893Fb9F847cED586eA5CDc98E240

**Area size: 85.749 m²**
Lat: -27.761900481334955, Lng: -48.54454624941209
Lat: -27.76131644846891, Lng: -48.54311201211897
Lat: -27.762187225708736, Lng: -48.54235723025937
Lat: -27.762969346161633, Lng: -48.540888351192905
Lat: -27.765134616665556, Lng: -48.5421469026237

# Justification Report

Sampling radius: 5 m
Sampling area: 78.54 m²

**Trees result**

Ai = Inspected area
P1 = Sampling trees 1
Pn = Sampling trees n
Ap = Sampling area n
n = Number of samplings

**Result = {[(P1 +...+ Pn) / n] * Ai} / Ap**

**Inspector report:**
Correu tudo bem com a inspeção

# Biodiversity

coordinate
Lat:
-27.762344509242972
Lng:
-48.54383715433535

coordinate
Lat:
-27.762392634216376
Lng:
-48.5438291176267

coordinate
Lat:
-27.762393001755587
Lng:
-48.54384694283296



coordinate
Lat:
-27.762406236302343
Lng:
-48.543795943515775

coordinate
Lat:
-27.762429681047433
Lng:
-48.54373911039725

coordinate
Lat:
-27.76242403754251
Lng:
-48.54372855742897

coordinate
Lat:
-27.762386088916774
Lng:
-48.54372110069926

coordinate
Lat: -27.7623666241956
Lng:
-48.543729462471326

coordinate
Lat:
-27.762340490568867
Lng:
-48.543697734723175

coordinate
Lat:
-27.762333889565337
Lng:
-48.543661824811515

coordinate
Lat:
-27.762332910182966
Lng:
-48.54367346611378

coordinate
Lat:
-27.762446589472948
Lng:
-48.543639638031074

coordinate
Lat:
-27.762434492829314
Lng:
-48.543614910232165

coordinate
Lat:
-27.76240210309939
Lng:
-48.54359869111613



coordinate
Lat:
-27.762396122680386
Lng:
-48.54364359591394

coordinate
Lat:
-27.762477925984488
Lng:
-48.54369982908089

coordinate
Lat:

coordinate
Lat:

coordinate
Lat:

coordinate
Lat:

-27.762543340949076
Lng:
-48.54368641196588

-27.76253996394007
Lng:
-48.54367896206532

-27.762365050668745
Lng:
-48.54359481895098

-27.76239295405928
Lng:
-48.54356092534519

coordinate
Lat:
-27.76232762182919
Lng:
-48.54352435224076

coordinate
Lat:
-27.762292516651982
Lng:
-48.54347840859504

coordinate
Lat:
-27.76220978000894
Lng:
-48.543471407967424

coordinate
Lat:
-27.76220251855935
Lng:
-48.54351086625516

coordinate
Lat:
-27.76221770660411
Lng:
-48.54344975510039

coordinate
Lat:
-27.76218290579567
Lng:
-48.54344833778404

coordinate
Lat:
-27.762141575475898
Lng:
-48.54339728188397

coordinate
Lat:
-27.762196362032444
Lng:
-48.543513435915614

coordinate
Lat:
-27.762186249119235
Lng:
-48.543520114586514

coordinate
Lat:
-27.762051967652443
Lng:
-48.54358978840016

coordinate
Lat:
-27.76202059540436
Lng:
-48.543587920024976

coordinate
Lat:
-27.76197475233733
Lng:
-48.543670404921805

coordinate
Lat:
-27.76199880061808
Lng:
-48.54366653725619

coordinate
Lat:
-27.76195273978756
Lng:
-48.54369866835588

coordinate
Lat:
-27.761921477807373
Lng:
-48.54362273718038

coordinate
Lat:
-27.761908526359242
Lng:
-48.543634882382705

coordinate
Lat:
-27.761894445672834
Lng:
-48.5436648443702

coordinate
Lat:
-27.761845233708094
Lng:
-48.543558054505276

coordinate
Lat:
-27.762422086696848
Lng:
-48.54335786779275

coordinate
Lat:
-27.762377411152944
Lng:
-48.54334646840444



coordinate
Lat:
-27.762359599596707
Lng:
-48.543306738183404



coordinate
Lat:
-27.762465295407697
Lng:
-48.543296512261534

coordinate
Lat:
-27.762470995101854
Lng:
-48.54330162522247

coordinate
Lat:
-27.762569370111283
Lng:
-48.54331695704954

coordinate
Lat:
-27.76272719310307
Lng:
-48.54324095314903

coordinate
Lat:
-27.762722648395695
Lng:
-48.54316037944145

coordinate
Lat:
-27.762791332397704
Lng:
-48.543063673546946

coordinate
Lat:
-27.762877076268506
Lng:
-48.54307143718032

coordinate
Lat:
-27.76294016201073
Lng:
-48.543095796186805

coordinate
Lat:
-27.763257700440946
Lng:
-48.543176808671724



coordinate
Lat:
-27.76341129569872
Lng:
-48.54331380081187

coordinate
Lat:
-27.763489070972376
Lng:
-48.543238199702856

coordinate
Lat:
-27.76359725644716
Lng:
-48.54297251273887

coordinate
Lat:
-27.76374625715623
Lng:
-48.54278555961085

coordinate
Lat:
-27.763730160063147
Lng:
-48.542663747382555

coordinate
Lat:
-27.76293141304307
Lng:
-48.54305888530662

coordinate
Lat:
-27.762871356706846
Lng:
-48.542975066274906

coordinate
Lat:
-27.762619270968962
Lng:
-48.54372591716101

coordinate
Lat:
-27.762622251682643
Lng:
-48.54374539305875

coordinate
Lat:
-27.762621282613733
Lng:
-48.54373211976936

coordinate
Lat:
-27.762826411332057
Lng:
-48.54380947116942

coordinate
Lat:
-27.762856151804137
Lng:
-48.543824708708854

coordinate
Lat:
-27.762902746567523
Lng:
-48.5437776364719

coordinate
Lat:
-27.762904088026733
Lng:
-48.54378459048322

coordinate
Lat:
-27.76290278883174
Lng:
-48.54378651832095

coordinate
Lat:
-27.762445881752857
Lng:
-48.54374898144219

coordinate
Lat:
-27.76271782339971
Lng:
-48.543801437718884

coordinate
Lat:
-27.76257300286345
Lng:
-48.543745614633465

coordinate
Lat:
-27.76225795145112
Lng:
-48.543022759795946

coordinate
Lat:
-27.762230447924757
Lng:
-48.54303241221207

coordinate
Lat:
-27.762321569737058
Lng:
-48.542988026516035

coordinate
Lat:
-27.762166064219656
Lng:
-48.54272600881014

coordinate
Lat:
-27.76214974870478
Lng:
-48.542798984037724

coordinate
Lat:
-27.76218007389403
Lng:
-48.54281287621594

coordinate
Lat:
-27.76218484690046
Lng:
-48.542710767325744

coordinate
Lat:
-27.762248660103204
Lng:
-48.54280965702276

coordinate
Lat: -27.7623322311038
Lng:
-48.542895426000456

coordinate
Lat:
-27.762388500839414
Lng:
-48.542864464531874

coordinate
Lat:
-27.762529952475447
Lng:
-48.542948668117674

coordinate
Lat:
-27.76256689179454
Lng:
-48.542837185459774

## Trees

Sampling #2

| 10 | 5 m | 78.54 m² |
|---|---|---|
| Trees | Radius | Area |

coordinate
Lat:
-27.76359725644716
Lng:
-48.54297251273887

coordinate
Lat:
-27.763586854403833
Lng:
-48.54299865152219

coordinate
Lat:
-27.76359256878304
Lng:
-48.5430004559604

coordinate
Lat:
-27.763599822620666
Lng:
-48.543003086535904

coordinate
Lat: -27.7636012398149
Lng:
-48.54300782680622



coordinate
Lat:
-27.76362307089859
Lng:
-48.54300208987855

coordinate
Lat:
-27.76362490876189
Lng:
-48.54300698984153

coordinate
Lat:
-27.763626978696415
Lng:
-48.54301864232316

coordinate
Lat:
-27.76363072778971
Lng:
-48.54301556748635

coordinate
Lat:
-27.763645756771773
Lng:
-48.543004265579356

Sampling #3

| 9 | 5 m | 78.54 m² |
|---|---|---|
| Trees | Radius | Area |

coordinate
Lat:
-27.76197475233733
Lng:
-48.543670404921805

coordinate
Lat:
-27.76199880061808
Lng:
-48.54366653725619

coordinate
Lat:
-27.76197768533786
Lng:
-48.5436759331484

coordinate
Lat:
-27.761990126503772
Lng:
-48.543674089268514

coordinate
Lat:
-27.76195273978756
Lng:
-48.54369866835588

coordinate
Lat:
-27.761952552774037
Lng:
-48.543719783977274

coordinate
Lat:
-27.761955299045194
Lng:
-48.54371197940716

coordinate
Lat:
-27.761952430892652
Lng:
-48.54371087379698

coordinate
Lat:
-27.761956362420655
Lng:
-48.54371353299911

Sampling #3

| 16 | 5 m | 78.54 m² |
|---|---|---|
| Trees | Radius | Area |

coordinate
Lat:
-27.763135680757337
Lng:
-48.54281438050457

coordinate
Lat:
-27.763135651409222
Lng:
-48.542840900254525

coordinate
Lat:
-27.76312818762499
Lng:
-48.54284856324426

coordinate
Lat:
-27.76312902794921
Lng:
-48.54285371075204

coordinate
Lat:
-27.76314405118297
Lng:
-48.54286822122314



coordinate
Lat:
-27.763149955391288
Lng:
-48.5428675662656

coordinate
Lat:
-27.763162842250857
Lng:
-48.542875780864804



coordinate
Lat:
-27.763175123836277
Lng:
-48.54288661666856

coordinate
Lat:
-27.763123195890614
Lng:
-48.54286732891009

coordinate
Lat:
-27.76311783651175
Lng:
-48.54286950893309

coordinate
Lat:
-27.763115864101305
Lng:
-48.54287007880909

coordinate
Lat:
-27.763115477672873
Lng:
-48.54288468326704

coordinate
Lat:
-27.763112934536515
Lng:
-48.54289055070228

coordinate
Lat:
-27.763118733578803
Lng:
-48.54289587148759

coordinate
Lat:
-27.76311110514122
Lng:
-48.54289922212158

coordinate
Lat:
-27.763108627490162
Lng:
-48.54289584696892

Sampling #4

| 0 | 5 m | 78.54 m² |
|---|---|---|
| Trees | Radius | Area |

## Regeneration Index

**Trees**

Indicator to measure the total amount of trees, palm trees and other plants over 1m high and 3cm in diameter in the regenerating area. How many trees, palm trees and other plants over 1m high and 3cm in diameter there is in the regenerating area? Justify your answer in the report.

| Index | Description | Result |
|---|---|---|
| 1 | Trees >= 50000 | REGENERATIVE 6 = +32 pts |
| 2 | Trees >= 25000 && Trees < 50000 | REGENERATIVE 5 = +16 pts |
| 3 | Trees >= 12500 && Trees < 25000 | REGENERATIVE 4 = +8 pts |
| 4 | Trees >= 6250 && Trees < 12500 | REGENERATIVE 3 = +4 pts |
| 5 | Trees >= 3125 && Trees < 6250 | REGENERATIVE 2 = +2 pts |
| 6 | Trees >= 20 && Trees < 3125 | REGENERATIVE 1 = +1 pts |
| 7 | Trees < 20 | NEUTRO = 0 pts |

**Biodiversity**

Indicator to measure the level of biodiversity of trees, palm trees and other plants over 1m high and 3cm in diameter in the regenerating area. How many different species are there in the area? Each different species is equivalent to one point and only trees and plants managed or planted by the regenerator should be counted.

| Index | Description | Result |
|---|---|---|
| 1 | Biodiversity >= 160 | REGENERATIVE 6 = +32 pts |
| 2 | Biodiversity >= 80 && Biodiversity < 160 | REGENERATIVE 5 = +16 pts |
| 3 | Biodiversity >= 40 && Biodiversity < 80 | REGENERATIVE 4 = +8 pts |
| 4 | Biodiversity >= 20 && Biodiversity < 40 | REGENERATIVE 3 = +4 pts |
| 5 | Biodiversity >= 10 && Biodiversity < 20 | REGENERATIVE 2 = +2 pts |
| | | |

| | | |
|---|---|---|
| 6 | Biodiversity >= 5 && Biodiversity < 10 | REGENERATIVE 1 = +1 pts |
| 7 | Biodiversity < 5 | NEUTRO = 0 pts |