Sintropia Method

Proof Photos

This report was automatically generated using Sintropia Method version 1. It is designed to help inspectors to perform the Regeneration Credit inspections. The goal is to measure how many tress over 1m high and 3cm of diameter there is on the regeneration area, and of how many different species.

Inspection #39
Generated on: 28/12/2025

Regenerator Data

Regenerator Address:
0x76fC7eDE2c586A49C326DDFaAc0A1AD6F142b737

Area size: 5.304 m²
Lat: -23.421294236279095, Lng: -46.09302307669719
Lat: -23.421301327538558, Lng: -46.09320468451449
Lat: -23.4215069738905, Lng: -46.09361040410565
Lat: -23.42174098486845, Lng: -46.093683820030975
Lat: -23.4219253568627, Lng: -46.093548580167266
Lat: -23.42196081298688, Lng: -46.09323559648328
Lat: -23.421772895425093, Lng: -46.09296511675586
Lat: -23.421602705705226, Lng: -46.092829876892125
Lat: -23.421446698268497, Lng: -46.092876244844916

Proof photo with regenerator



Proof photos of area