Sintropia Method

439	35
Trees	Biodiversity

This report was automatically generated using Sintropia Method version 1. The goal is to measure how many tress over 1m high and 3cm of diameter there is on the regeneration area, and of how many different species.

Inspection #39
Generated on: 28/12/2025

Regenerator Data

Regenerator Address:
0x76fC7eDE2c586A49C326DDFaAc0A1AD6F142b737

Area size: 5.304 m²
Lat: -23.421294236279095, Lng: -46.09302307669719
Lat: -23.421301327538558, Lng: -46.09320468451449
Lat: -23.4215069738905, Lng: -46.09361040410565
Lat: -23.42174098486845, Lng: -46.093683820030975
Lat: -23.4219253568627, Lng: -46.093548580167266
Lat: -23.42196081298688, Lng: -46.09323559648328
Lat: -23.421772895425093, Lng: -46.09296511675586
Lat: -23.421602705705226, Lng: -46.092829876892125
Lat: -23.421446698268497, Lng: -46.092876244844916

Justification Report

Sampling radius: 5 m
Sampling area: 78.54 m²

Trees result

Ai = Inspected area
P1 = Sampling trees 1
Pn = Sampling trees n
Ap = Sampling area n
n = Number of samplings

Result = {[(P1 +...+ Pn) / n] * Ai} / Ap

Inspector report:
null

Biodiversity

coordinate
Lat:
-23.421435487372367
Lng:
-46.09297795804088

coordinate
Lat:
-23.42144555000915
Lng:
-46.09298295270443

coordinate
Lat:
-23.42147948688215
Lng:
-46.09301090244771

coordinate
Lat:
-23.421518925680058
Lng:
-46.09299804717406

coordinate
Lat:
-23.421521396391796
Lng:
-46.09300805260064

coordinate
Lat:
-23.421550644218563
Lng:
-46.09301129610174

coordinate
Lat:
-23.421572683780596
Lng:
-46.09305545373084

coordinate
Lat:
-23.421589478155934
Lng:
-46.09305132791666

coordinate
Lat:
-23.42159522000486
Lng:
-46.093070102913444

coordinate
Lat:
-23.42163528573807
Lng:
-46.093067473106785

coordinate
Lat:
-23.421652890062564
Lng:
-46.0930577088536

coordinate
Lat:
-23.421637810751466
Lng:
-46.09305331778929





coordinate
Lat:
-23.421589996291306
Lng:
-46.093071723778465

coordinate
Lat:
-23.42157803317786
Lng:
-46.09311132341499

coordinate
Lat:
-23.421524137664882
Lng:
-46.09310771433718

coordinate
Lat:
-23.421549344667465
Lng:
-46.09313017895656

coordinate
Lat:
-23.42154167902389
Lng:
-46.09311480842262

coordinate
Lat:
-23.421570084878592
Lng:
-46.0931622435465

coordinate
Lat:
-23.421570769972686
Lng:
-46.09318577518366

coordinate
Lat:
-23.421584259694516
Lng:
-46.09314526240622

coordinate
Lat:
-23.421668794685722
Lng:
-46.093191250155606



coordinate
Lat:
-23.421713531668743
Lng:
-46.09324429652348

coordinate
Lat:
-23.421715140579668
Lng:
-46.093220279359755

coordinate
Lat:
-23.42173133443751
Lng:
-46.09328968626152

coordinate
Lat:
-23.421742599646375
Lng:
-46.093302896716764

coordinate
Lat:
-23.42185361313021
Lng:
-46.093426980121144



coordinate
Lat:
-23.421803945482853
Lng:
-46.09355225856357

coordinate
Lat:
-23.421480790116398
Lng:
-46.09350413321123

coordinate
Lat:
-23.42145600559145
Lng:
-46.09347748510563

coordinate
Lat:
-23.42144814861641
Lng:
-46.093459236435095

coordinate
Lat:
-23.42142664632775
Lng:
-46.093368333639155

coordinate
Lat:
-23.421265999808366
Lng:
-46.093395715622314

coordinate
Lat:
-23.42135499928144
Lng:
-46.09325053214196

coordinate
Lat:
-23.42143488121971
Lng:
-46.09307626362147

coordinate
Lat:
-23.421422364205828
Lng:
-46.09295558188678

Trees

Sampling #1

1	5 m	78.54 m²
Trees	Radius	Area



coordinate
Lat:
-23.421803945482853
Lng:
-46.09355225856357

Sampling #2

12	5 m	78.54 m²
Trees	Radius	Area

coordinate
Lat:
-23.421564684284107
Lng:
-46.09312743550889

coordinate
Lat:
-23.421552555964837
Lng:
-46.09313108478881



coordinate
Lat:
-23.421549344667465
Lng:
-46.09313017895656

coordinate
Lat:
-23.42154167902389
Lng:
-46.09311480842262

coordinate
Lat:
-23.421540094359578
Lng:
-46.093145184143275

coordinate
Lat:
-23.421526193920307
Lng:
-46.09315968348012

coordinate
Lat:
-23.421511762974518
Lng:
-46.0931685437699

coordinate
Lat: -23.4215242669621
Lng:
-46.09311634494211



coordinate
Lat:
-23.421570084878592
Lng:
-46.0931622435465

coordinate
Lat:
-23.42157291741458
Lng:
-46.093176996213664

coordinate
Lat:
-23.421575723054996
Lng:
-46.093187514875254

coordinate
Lat:
-23.421570769972686
Lng:
-46.09318577518366

Regeneration Index

Trees

Indicator to measure the total amount of trees, palm trees and other plants over 1m high and 3cm in diameter in the regenerating area. How many trees, palm trees and other plants over 1m high and 3cm in diameter there is in the regenerating area? Justify your answer in the report.

Index	Description	Result
	Trees >= 50000	REGENERATIVE 6 = +32 pts

1		
2	Trees >= 25000 && Trees < 50000	REGENERATIVE 5 = +16 pts
3	Trees >= 12500 && Trees < 25000	REGENERATIVE 4 = +8 pts
4	Trees >= 6250 && Trees < 12500	REGENERATIVE 3 = +4 pts
5	Trees >= 3125 && Trees < 6250	REGENERATIVE 2 = +2 pts
6	Trees >= 20 && Trees < 3125	REGENERATIVE 1 = +1 pts
7	Trees < 20	NEUTRO = 0 pts

Biodiversity

Indicator to measure the level of biodiversity of trees, palm trees and other plants over 1m high and 3cm in diameter in the regenerating area. How many different species are there in the area? Each different species is equivalent to one point and only trees and plants managed or planted by the regenerator should be counted.

Index	Description	Result
1	Biodiversity >= 160	REGENERATIVE 6 = +32 pts
2	Biodiversity >= 80 && Biodiversity < 160	REGENERATIVE 5 = +16 pts
3	Biodiversity >= 40 && Biodiversity < 80	REGENERATIVE 4 = +8 pts
4	Biodiversity >= 20 && Biodiversity < 40	REGENERATIVE 3 = +4 pts
5	Biodiversity >= 10 && Biodiversity < 20	REGENERATIVE 2 = +2 pts
6	Biodiversity >= 5 && Biodiversity < 10	REGENERATIVE 1 = +1 pts
7	Biodiversity < 5	NEUTRO = 0 pts