Sintropia Method

2319	39
Trees	Biodiversity

This report was automatically generated using Sintropia Method version 1. The goal is to measure how many tress over 1m high and 3cm of diameter there is on the regeneration area, and of how many different species.

Inspection #47
Generated on: 13/02/2026

Regenerator Data

Regenerator Address:
0xB8C9475fEDF4A0A30f4FEe19Dd434253A7998B57

Area size: 21.426 m²
Lat: -23.081210527272987, Lng: -45.824058477694365
Lat: -23.080852139436047, Lng: -45.82504216033496
Lat: -23.08107094466793, Lng: -45.826009448110796
Lat: -23.081497236946163, Lng: -45.8266734337619
Lat: -23.08204424673363, Lng: -45.825751231364336

Justification Report

Sampling radius: 5 m
Sampling area: 78.54 m²

Trees result

Ai = Inspected area
P1 = Sampling trees 1
Pn = Sampling trees n
Ap = Sampling area n
n = Number of samplings

Result = {[(P1 +...+ Pn) / n] * Ai} / Ap

Inspector report:
Correu tudo bem com a inspeção

Biodiversity

coordinate
Lat:
-23.081785513533493
Lng:
-45.82534599010502

coordinate
Lat:
-23.081757314529295
Lng:
-45.82534795335937

coordinate
Lat:
-23.081749457271194
Lng:
-45.82533364398953

coordinate
Lat:
-23.081737054663453
Lng:
-45.8253372057475



coordinate
Lat:
-23.081734874476435
Lng:
-45.82538022452008

coordinate
Lat:
-23.08168703759437
Lng:
-45.82538659839856

coordinate
Lat:
-23.081702387156543
Lng:
-45.825413961103536

coordinate
Lat:
-23.081691384412533
Lng:
-45.82541028493271

coordinate
Lat: -23.0816830188695
Lng:
-45.82542896582216



coordinate
Lat:
-23.08166125451771
Lng:
-45.82547153272687

coordinate
Lat:
-23.081583583523763
Lng:
-45.825501969350356

coordinate
Lat:
-23.081599332990173
Lng:
-45.825509306501374

coordinate
Lat:
-23.081611877650676
Lng:
-45.82552708260831

coordinate
Lat:
-23.08152894648585
Lng:
-45.82547416314935



coordinate
Lat:
-23.081504962151367
Lng:
-45.82545073904511

coordinate
Lat:
-23.081531573515974
Lng:
-45.825455041133864

coordinate
Lat:



coordinate
Lat:



coordinate
Lat:

coordinate
Lat:

-23.081508714356335
Lng:
-45.825456941445466

-23.08147563768763
Lng:
-45.8254172705262

-23.081470584826533
Lng:
-45.82540035915321

-23.08145753743447
Lng:
-45.82540865518725

coordinate
Lat:
-23.081452552887153
Lng:
-45.82541484876566

coordinate
Lat: -23.0814219789962
Lng:
-45.8254136762013

coordinate
Lat:
-23.081414775511792
Lng:
-45.82543468072581

coordinate
Lat:
-23.081296595819925
Lng:
-45.82538670988879

coordinate
Lat:
-23.08127404873917
Lng:
-45.82535833121149



coordinate
Lat:
-23.081273189383616
Lng:
-45.825283167204425



coordinate
Lat:
-23.08128949994437
Lng:
-45.82523131455957

coordinate
Lat:
-23.081296820355462
Lng:
-45.82520351687139

coordinate
Lat:
-23.081284112011105
Lng:
-45.82519501731607

coordinate
Lat:
-23.08124707727627
Lng:
-45.82516127533411

coordinate
Lat:
-23.081276639321143
Lng:
-45.82506485164356

coordinate
Lat:
-23.081355715471947
Lng:
-45.82490909954091



coordinate
Lat:
-23.081204666999202
Lng:
-45.82478829704439

coordinate
Lat:
-23.081211096012765
Lng:
-45.82480349287458

coordinate
Lat:
-23.08117783044018
Lng:
-45.824554628116985

coordinate
Lat:
-23.081053314076144
Lng:
-45.82465106155445

coordinate
Lat: -23.0810775162324
Lng:
-45.82496361526718

coordinate
Lat:
-23.081106576152933
Lng:
-45.82509837117588

coordinate
Lat:
-23.081102248291625
Lng:
-45.82519900214866

Trees

Sampling #1

1	5 m	78.54 m²
Trees	Radius	Area

coordinate
Lat:
-23.081308859285016
Lng:
-45.82584260876182

Sampling #2

16	5 m	78.54 m²
Trees	Radius	Area

coordinate
Lat:
-23.081355715471947
Lng:
-45.82490909954091



coordinate
Lat:
-23.081359734638347
Lng:
-45.824936936574005

coordinate
Lat:
-23.081376281082576
Lng:
-45.82493751903633

coordinate
Lat:
-23.08136883695219
Lng:
-45.824924231700585

coordinate
Lat:
-23.081364593342965
Lng:
-45.824913607900484

coordinate
Lat:
-23.08135086783511
Lng:
-45.824917712426846

coordinate
Lat:
-23.08137088873438
Lng:
-45.824907793531004

coordinate
Lat: -23.0813781576977
Lng:
-45.82490919470475



coordinate
Lat:
-23.081381856543377
Lng:
-45.82489878407919



coordinate
Lat:
-23.081380058651014
Lng:
-45.82489898996406

coordinate
Lat:
-23.081369623092083
Lng:
-45.82489194617558



coordinate
Lat:
-23.08136982978673
Lng:
-45.82488883120636

coordinate
Lat:
-23.081361853391574
Lng:
-45.824888388203156

coordinate
Lat:
-23.08134732160623
Lng:
-45.82488622904454



coordinate
Lat:
-23.081351238538712
Lng:
-45.82493260583748

coordinate
Lat:
-23.081355264915917
Lng:
-45.82494060398372

Regeneration Index

Trees

Indicator to measure the total amount of trees, palm trees and other plants over 1m high and 3cm in diameter in the regenerating area. How many trees, palm trees and other plants over 1m high and 3cm in diameter there is in the regenerating area? Justify your answer in the report.

Index	Description	Result
1	Trees >= 50000	REGENERATIVE 6 = +32 pts
2	Trees >= 25000 && Trees < 50000	REGENERATIVE 5 = +16 pts
3	Trees >= 12500 && Trees < 25000	REGENERATIVE 4 = +8 pts
4	Trees >= 6250 && Trees < 12500	REGENERATIVE 3 = +4 pts
5	Trees >= 3125 && Trees < 6250	REGENERATIVE 2 = +2 pts
6	Trees >= 20 && Trees < 3125	REGENERATIVE 1 = +1 pts
7	Trees < 20	NEUTRO = 0 pts

Biodiversity

Indicator to measure the level of biodiversity of trees, palm trees and other plants over 1m high and 3cm in diameter in the regenerating area. How many different species are there in the area? Each different species is equivalent to one point and only trees and plants managed or planted by the regenerator should be counted.

Index	Description	Result
1	Biodiversity >= 160	REGENERATIVE 6 = +32 pts
2	Biodiversity >= 80 && Biodiversity < 160	REGENERATIVE 5 = +16 pts
3	Biodiversity >= 40 && Biodiversity < 80	REGENERATIVE 4 = +8 pts
4	Biodiversity >= 20 && Biodiversity < 40	REGENERATIVE 3 = +4 pts
5	Biodiversity >= 10 && Biodiversity < 20	REGENERATIVE 2 = +2 pts
6	Biodiversity >= 5 && Biodiversity < 10	REGENERATIVE 1 = +1 pts
7	Biodiversity < 5	NEUTRO = 0 pts