Sintropia Method

5688	66
Trees	Biodiversity

This report was automatically generated using Sintropia Method version 1. The goal is to measure how many tress over 1m high and 3cm of diameter there is on the regeneration area, and of how many different species.

Inspection #53
Generated on: 08/03/2026

Regenerator Data

Regenerator Address:
0xaAd26CC704f6A34ec3e31e418F80A1b066603f23

Area size: 55.839 m²
Lat: -23.09450288287357, Lng: -45.8132327803624
Lat: -23.094308541593293, Lng: -45.812642177080704
Lat: -23.09427762363714, Lng: -45.81204197049422
Lat: -23.090988909679652, Lng: -45.81139646576898
Lat: -23.090616016759014, Lng: -45.8125156375242

Justification Report

Sampling radius: 5 m
Sampling area: 78.54 m²

Trees result

Ai = Inspected area
P1 = Sampling trees 1
Pn = Sampling trees n
Ap = Sampling area n
n = Number of samplings

Result = {[(P1 +...+ Pn) / n] * Ai} / Ap

Inspector report:
null

Biodiversity



coordinate
Lat:
-23.09254050071793
Lng:
-45.812038331711406

coordinate
Lat:
-23.09252668222678
Lng:
-45.81207210501424

coordinate
Lat:
-23.09257509000577
Lng:
-45.812059130438215

coordinate
Lat:
-23.09257728088827
Lng:
-45.81209427904086

coordinate
Lat:
-23.09259537411532
Lng:
-45.81212276830883

coordinate
Lat:
-23.092596694368176
Lng:
-45.812130933049986

coordinate
Lat:
-23.09259725693308
Lng:
-45.81216946718515

coordinate
Lat:
-23.09258903892446
Lng:
-45.812179181747844

coordinate
Lat:
-23.09258946361784
Lng:
-45.81217513137244

coordinate
Lat:
-23.09259141565987
Lng:
-45.81217001204133

coordinate
Lat:
-23.092616595684873
Lng:
-45.81221759874471

coordinate
Lat:
-23.092615891430633
Lng:
-45.81224170245093

coordinate
Lat:
-23.092621055675355
Lng:
-45.81225239269097



coordinate
Lat:
-23.09255719252326
Lng:
-45.81241291659689

coordinate
Lat:
-23.092561313230807
Lng:
-45.812411672265576

coordinate
Lat: -23.0925557633822
Lng:
-45.812412519895986

coordinate
Lat:

coordinate
Lat:



coordinate
Lat:

coordinate
Lat:

-23.092554351070707
Lng:
-45.81243047280702

-23.092526479529774
Lng:
-45.81238367738957

-23.092528100450597
Lng:
-45.81237322034268

-23.092509152129868
Lng:
-45.81239789229694

coordinate
Lat:
-23.09251718790109
Lng:
-45.8123944312683

coordinate
Lat:
-23.092508317249873
Lng:
-45.81244025651991

coordinate
Lat:
-23.092515045670744
Lng:
-45.81244996532595

coordinate
Lat:
-23.092492657535235
Lng:
-45.81242264399184

coordinate
Lat:
-23.092455812213753
Lng:
-45.81242715534243

coordinate
Lat:
-23.09243788505868
Lng:
-45.81241547176696

coordinate
Lat:
-23.09245194127239
Lng:
-45.81245190449285

coordinate
Lat:
-23.092426919733143
Lng:
-45.812390161377515

coordinate
Lat:
-23.092430316176994
Lng:
-45.81237463436832

coordinate
Lat: -23.0924370285039
Lng:
-45.81237730837548

coordinate
Lat:
-23.092422744795144
Lng:
-45.812392180538964

coordinate
Lat:
-23.092403372760867
Lng: -45.812394175547

coordinate
Lat:
-23.092405606440266
Lng:
-45.8123933681574

coordinate
Lat:
-23.092383855414848
Lng:
-45.81236770140807

coordinate
Lat:
-23.09237012526504
Lng:
-45.81235562342767

coordinate
Lat:
-23.09232309413591
Lng:
-45.81236104446789

coordinate
Lat:
-23.092300577310738
Lng:
-45.812355734966815

coordinate
Lat:
-23.09225698289707
Lng:
-45.812339578361964

coordinate
Lat:
-23.092253687984346
Lng:
-45.81232132681571

coordinate
Lat:
-23.09222766036184
Lng:
-45.812350266235136

coordinate
Lat: -23.0921887460241
Lng:
-45.812321759215784



coordinate
Lat:
-23.092180305394756
Lng:
-45.81233345935438

coordinate
Lat:
-23.09213152646483
Lng:
-45.812338806769425

coordinate
Lat:
-23.09214403183463
Lng:
-45.81231326769535

coordinate
Lat:
-23.09212094097861
Lng:
-45.812444488881354

coordinate
Lat:
-23.092098210386087
Lng:
-45.81243174973126

coordinate
Lat:
-23.09198653792669
Lng:
-45.81236860719119

coordinate
Lat:
-23.091792041967246
Lng:
-45.8123239446967

coordinate
Lat:
-23.091675778872418
Lng:
-45.812297109557136

coordinate
Lat:
-23.091755406952547
Lng:
-45.81200064164196

coordinate
Lat:
-23.091909126877752
Lng:
-45.811901842787485

coordinate
Lat:
-23.092031571160227
Lng:
-45.81171279771408

coordinate
Lat:
-23.092115325874733
Lng:
-45.81167341214214

coordinate
Lat:
-23.092299157795143
Lng:
-45.811806357555305

coordinate
Lat:
-23.092444743603533
Lng:
-45.81194929472247

coordinate
Lat:
-23.092815654191053
Lng:
-45.81203707869427

coordinate
Lat:
-23.09288800208087
Lng:
-45.81205219129983

coordinate
Lat:
-23.09308334774174
Lng:
-45.812013259997244

coordinate
Lat:
-23.09314789568328
Lng:
-45.81199864638428

coordinate
Lat:
-23.093315047182482
Lng:
-45.81201997119605

coordinate
Lat:
-23.093574573307386
Lng:
-45.812171548647626

coordinate
Lat:
-23.09368090564283
Lng:
-45.81207287708581

coordinate
Lat:
-23.093697756518328
Lng:
-45.812092789865986

coordinate
Lat:
-23.093585545644657
Lng:
-45.8120653413499

coordinate
Lat: -23.093411413198
Lng:
-45.811994313174814

coordinate
Lat:
-23.09249811379783
Lng:
-45.812307478298486

Trees

Sampling #1

13	5 m	78.54 m²
Trees	Radius	Area

coordinate
Lat:
-23.093959772301808
Lng:
-45.81255947956345

coordinate
Lat:
-23.093953157400403
Lng:
-45.812533598363174

coordinate
Lat:
-23.093954605357357
Lng:
-45.81252023581175

coordinate
Lat:
-23.093949324963166
Lng: -45.812517858159

coordinate
Lat:
-23.09395225344918
Lng:
-45.81251506097393

coordinate
Lat:
-23.093953195612524
Lng:
-45.81251390371234

coordinate
Lat:
-23.09395010799349
Lng:
-45.81251475833836

coordinate
Lat:
-23.09394221177483
Lng:
-45.81250937054932

coordinate
Lat:
-23.093934551422457
Lng:
-45.81249726089453

coordinate
Lat:
-23.093928575604505
Lng:
-45.81249341128465

coordinate
Lat:
-23.093923922041082
Lng:
-45.812484029853614

coordinate
Lat:
-23.093947938952006
Lng:
-45.81248859947595

coordinate
Lat:
-23.093956128975766
Lng:
-45.8124910025455

Sampling #2

3	5 m	78.54 m²
Trees	Radius	Area

coordinate
Lat:
-23.09212094097861
Lng:
-45.812444488881354

coordinate
Lat:
-23.092098210386087
Lng:
-45.81243174973126

coordinate
Lat:
-23.09210561158515
Lng:
-45.81242916502579

Regeneration Index

Trees
Indicator to measure the total amount of trees, palm trees and other plants over 1m high and 3cm in diameter in the regenerating area. How many trees, palm trees and other plants over 1m high and 3cm in diameter there is in the regenerating area? Justify your answer in the report.

Index	Description	Result
1	Trees >= 50000	REGENERATIVE 6 = +32 pts
2	Trees >= 25000 && Trees < 50000	REGENERATIVE 5 = +16 pts
3	Trees >= 12500 && Trees < 25000	REGENERATIVE 4 = +8 pts
4	Trees >= 6250 && Trees < 12500	REGENERATIVE 3 = +4 pts
5	Trees >= 3125 && Trees < 6250	REGENERATIVE 2 = +2 pts
6	Trees >= 20 && Trees < 3125	REGENERATIVE 1 = +1 pts
7	Trees < 20	NEUTRO = 0 pts

Biodiversity
Indicator to measure the level of biodiversity of trees, palm trees and other plants over 1m high and 3cm in diameter in the regenerating area. How many different species are there in the area? Each different species is equivalent to one point and only trees and plants managed or planted by the regenerator should be counted.

Index	Description	Result

1	Biodiversity >= 160	REGENERATIVE 6 = +32 pts
2	Biodiversity >= 80 && Biodiversity < 160	REGENERATIVE 5 = +16 pts
3	Biodiversity >= 40 && Biodiversity < 80	REGENERATIVE 4 = +8 pts
4	Biodiversity >= 20 && Biodiversity < 40	REGENERATIVE 3 = +4 pts
5	Biodiversity >= 10 && Biodiversity < 20	REGENERATIVE 2 = +2 pts
6	Biodiversity >= 5 && Biodiversity < 10	REGENERATIVE 1 = +1 pts
7	Biodiversity < 5	NEUTRO = 0 pts