Sintropia Method

47069	44
Trees	Biodiversity

This report was automatically generated using Sintropia Method version 1. The goal is to measure how many tress over 1m high and 3cm of diameter there is on the regeneration area, and of how many different species.

Inspection #60
Generated on: 18/03/2026

Regenerator Data

Regenerator Address:
0x4d9c3EafA8A88dd5712c0CC115F08aEf41D924f5

Area size: 246.454 m²
Lat: -23.807918302678985, Lng: -47.434311668867906
Lat: -23.807309366121274, Lng: -47.43534904236611
Lat: -23.806416446741693, Lng: -47.4344778004853
Lat: -23.80528888549503, Lng: -47.43501301561068
Lat: -23.806568556288312, Lng: -47.43811702774207
Lat: -23.807385711086127, Lng: -47.43990003908331
Lat: -23.80806379817801, Lng: -47.44030764448212
Lat: -23.81027495132605, Lng: -47.43891702222166
Lat: -23.810686992452787, Lng: -47.4382476108359
Lat: -23.809511232694916, Lng: -47.43595699858906

Justification Report

Sampling radius: 5 m
Sampling area: 78.54 m²

Trees result

Ai = Inspected area
P1 = Sampling trees 1
Pn = Sampling trees n
Ap = Sampling area n
n = Number of samplings

Result = {[(P1 +...+ Pn) / n] * Ai} / Ap

Inspector report:
Correu tudo bem

Biodiversity

coordinate
Lat:
-23.80919914805086
Lng:
-47.43703842004685

coordinate
Lat:
-23.809213293738484
Lng:
-47.437033820941515

coordinate
Lat:
-23.809279762230634
Lng:
-47.43715183813817

coordinate
Lat:
-23.809359518735082
Lng:
-47.43713806399193

coordinate
Lat:
-23.80938143202709
Lng:
-47.43712715872352

coordinate
Lat:
-23.809412114628692
Lng:
-47.43712617346918

coordinate
Lat:
-23.80943278235414
Lng:
-47.437150761314534

coordinate
Lat:
-23.809365926011036
Lng:
-47.43714574377978

coordinate
Lat:
-23.809373845431878
Lng:
-47.437148040329824

coordinate
Lat:
-23.809348327164074
Lng:
-47.43716340050916

coordinate
Lat:
-23.809307219695366
Lng:
-47.43714646236675

coordinate
Lat:
-23.80935357618643
Lng:
-47.43719675381838

coordinate
Lat:
-23.809376404331182
Lng:
-47.43719073173706

coordinate
Lat:
-23.80937754199703
Lng:
-47.437251317105336

coordinate
Lat:
-23.809379992600736
Lng:
-47.43723964062633

coordinate
Lat:
-23.80939679600074
Lng:
-47.437235178549976

coordinate
Lat:
-23.809414868813015
Lng:
-47.43724392792952

coordinate
Lat:
-23.809316856149486
Lng:
-47.437253798177416

coordinate
Lat: -23.8093209768245
Lng:
-47.437263339126304



coordinate
Lat:
-23.809300571489945
Lng:
-47.43723156201606

coordinate
Lat:
-23.80929241786367
Lng:
-47.43725938248777

coordinate
Lat:
-23.80927407060684
Lng:
-47.43721210863094

coordinate
Lat:
-23.809254751197006
Lng:
-47.43721151465348

coordinate
Lat:
-23.80928439454978
Lng:
-47.43713745151784



coordinate
Lat:
-23.80925784898419
Lng:
-47.43728261085136

coordinate
Lat:
-23.809263758706756
Lng:
-47.437355262398476

coordinate
Lat:
-23.80927347669177
Lng:
-47.437358707829276

coordinate
Lat:
-23.809291663059806
Lng:
-47.43730126935017



coordinate
Lat:
-23.809356060669035
Lng:
-47.437309477693006

coordinate
Lat:
-23.809428459843115
Lng:
-47.43717500662541



coordinate
Lat:
-23.809471966474472
Lng:
-47.437212330606954

coordinate
Lat:
-23.80949801559991
Lng:
-47.43723353688386

coordinate
Lat:
-23.809501764503793
Lng:
-47.437320561939096

coordinate
Lat:
-23.80953197189073
Lng:
-47.437135761425544

coordinate
Lat:
-23.809295456046453
Lng:
-47.43696559568133

coordinate
Lat:
-23.809182810580644
Lng:
-47.43683816150264

coordinate
Lat:
-23.809068197633838
Lng:
-47.43640758593388

coordinate
Lat: -23.8090585068686
Lng:
-47.436362864711775

coordinate
Lat:
-23.80844852765941
Lng:
-47.43577377962517

coordinate
Lat:
-23.80845619030827
Lng:
-47.435768085274056

coordinate
Lat:
-23.808595954204193
Lng:
-47.43559144530134

coordinate
Lat:
-23.808020202052965
Lng:
-47.43514347807203

coordinate
Lat:
-23.808065810388953
Lng:
-47.43562338991762

coordinate
Lat:
-23.80792453698805
Lng:
-47.436525179339704

Trees

Sampling #3

18	5 m	78.54 m²
Trees	Radius	Area

coordinate
Lat:

coordinate
Lat:

coordinate
Lat:

coordinate
Lat:

-23.809325424092087
Lng:
-47.43733570964781

-23.809336108654193
Lng:
-47.437320350064965

-23.809339114873847
Lng:
-47.43731826052754

-23.80929953053777
Lng:
-47.43728947533383

coordinate
Lat:
-23.80933187720444
Lng:
-47.43730042663292

coordinate
Lat:
-23.809309410589556
Lng:
-47.43730024307678

coordinate
Lat:
-23.80930486484518
Lng:
-47.43729766347739

coordinate
Lat:
-23.809301946766173
Lng:
-47.43728799083399

coordinate
Lat:
-23.809289797745983
Lng:
-47.437315419851856



coordinate
Lat:
-23.809290508497117
Lng:
-47.43731690696546

coordinate
Lat:
-23.809272034379557
Lng:
-47.43731985455463

coordinate
Lat:
-23.80926216563912
Lng:
-47.43733311404281

coordinate
Lat:
-23.80926556390097
Lng:
-47.43733722978271

coordinate
Lat:
-23.80926187101167
Lng:
-47.43733740688607

coordinate
Lat:
-23.809285465602837
Lng:
-47.437366681402835

coordinate
Lat: -23.8092983878449
Lng:
-47.43733672094943

coordinate
Lat:
-23.809283344307065
Lng:
-47.43735824060666

coordinate
Lat:
-23.809282957178613
Lng:
-47.43735559074606

Sampling #3

12	5 m	78.54 m²
Trees	Radius	Area

coordinate
Lat:
-23.80927808322881
Lng:
-47.437162789561754

coordinate
Lat:
-23.809280374264052
Lng:
-47.437165546000244

coordinate
Lat:
-23.809281802258372
Lng:
-47.43716473093042

coordinate
Lat:
-23.80927958785334
Lng:
-47.43716058445414

coordinate
Lat:
-23.80928292360217
Lng:
-47.43715752988701

coordinate
Lat:
-23.809286071023436
Lng:
-47.43715356152691

coordinate
Lat: -23.8092712197624
Lng:
-47.43715002626742

coordinate
Lat:
-23.809268197566567
Lng:
-47.43714618878272

coordinate
Lat:
-23.809260414717766
Lng:
-47.437146558290436

coordinate
Lat:
-23.809260059634678
Lng:
-47.43715183685825

coordinate
Lat:
-23.809257363576467
Lng:
-47.43715597600149

coordinate
Lat:
-23.809265830822387
Lng:
-47.4371620260735

Regeneration Index

Trees

Indicator to measure the total amount of trees, palm trees and other plants over 1m high and 3cm in diameter in the regenerating area. How many trees, palm trees and other plants over 1m high and 3cm in diameter there is in the regenerating area? Justify your answer in the report.

Index	Description	Result
	Trees >= 50000	REGENERATIVE 6 = +32 pts

1		
2	Trees >= 25000 && Trees < 50000	REGENERATIVE 5 = +16 pts
3	Trees >= 12500 && Trees < 25000	REGENERATIVE 4 = +8 pts
4	Trees >= 6250 && Trees < 12500	REGENERATIVE 3 = +4 pts
5	Trees >= 3125 && Trees < 6250	REGENERATIVE 2 = +2 pts
6	Trees >= 20 && Trees < 3125	REGENERATIVE 1 = +1 pts
7	Trees < 20	NEUTRO = 0 pts

Biodiversity

Indicator to measure the level of biodiversity of trees, palm trees and other plants over 1m high and 3cm in diameter in the regenerating area. How many different species are there in the area? Each different species is equivalent to one point and only trees and plants managed or planted by the regenerator should be counted.

Index	Description	Result
1	Biodiversity >= 160	REGENERATIVE 6 = +32 pts
2	Biodiversity >= 80 && Biodiversity < 160	REGENERATIVE 5 = +16 pts
3	Biodiversity >= 40 && Biodiversity < 80	REGENERATIVE 4 = +8 pts
4	Biodiversity >= 20 && Biodiversity < 40	REGENERATIVE 3 = +4 pts
5	Biodiversity >= 10 && Biodiversity < 20	REGENERATIVE 2 = +2 pts
6	Biodiversity >= 5 && Biodiversity < 10	REGENERATIVE 1 = +1 pts
7	Biodiversity < 5	NEUTRO = 0 pts